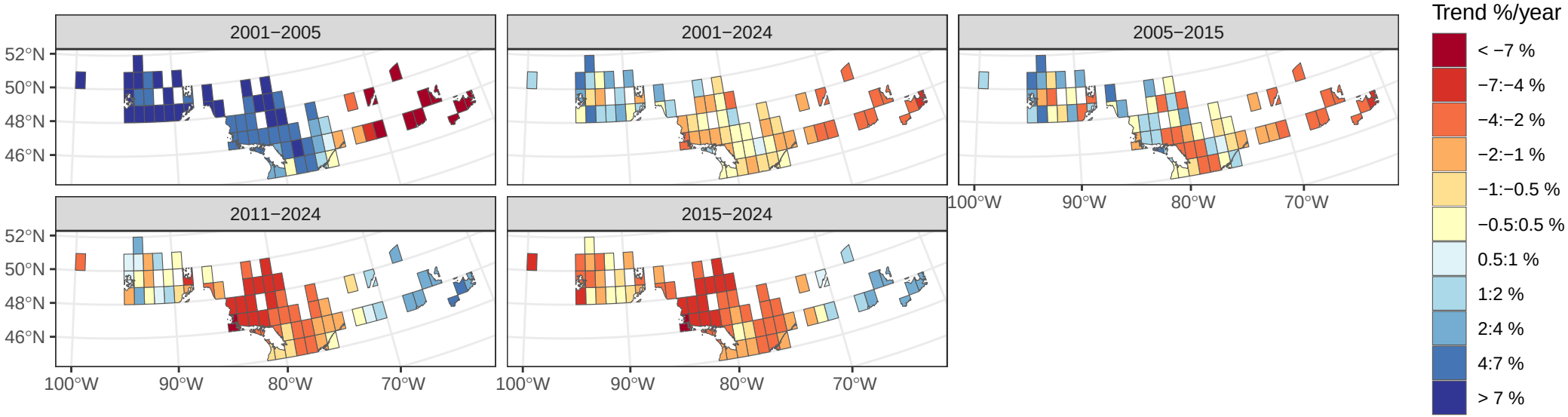
2001−2005
2001−2024
2005−2015
2011−2024
2015−2024
52°N
50°N
48°N
46°N
100°W
90°W
80°W
70°W
Trend %/year
< −7 %
−7:−4 %
−4:−2 %
−2:−1 %
−1:−0.5 %
−0.5:0.5 %
0.5:1 %
1:2 %
2:4 %
4:7 %
> 7 %

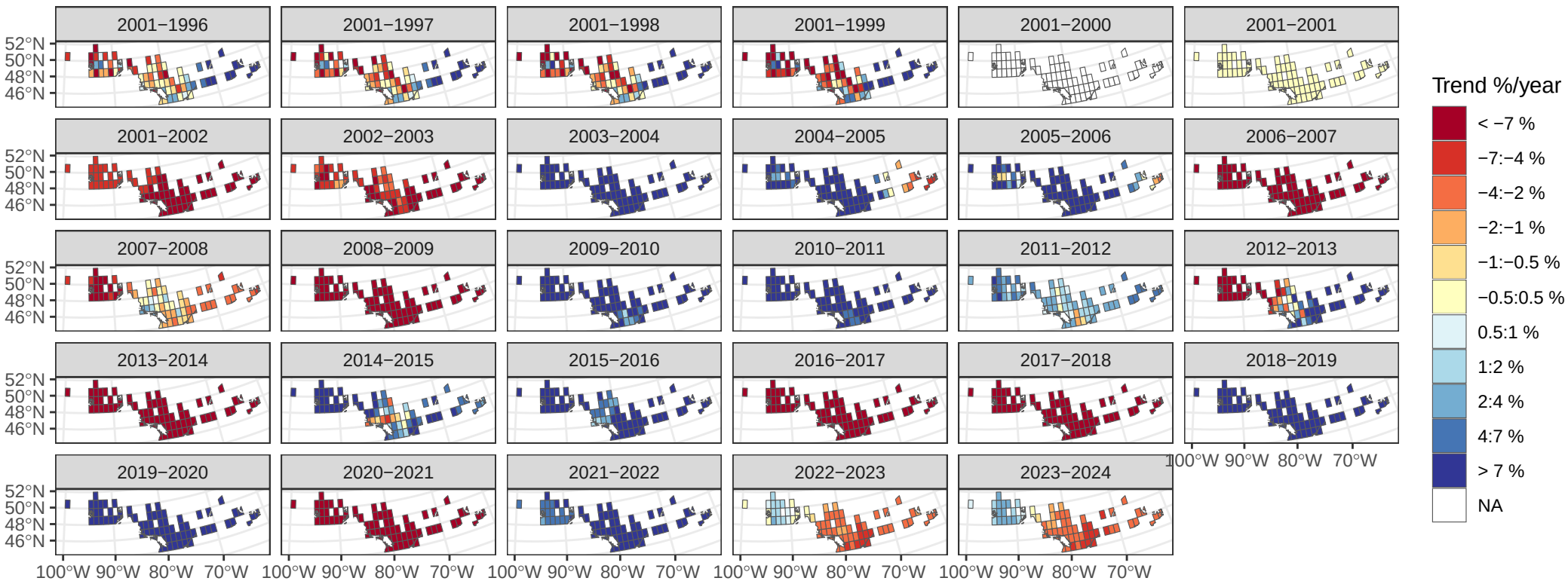
2001−1996
2001−1997
2001−1998
2001−1999
2001−2000
2001−2001
2001−2002
2002−2003
2003−2004
2004−2005
2005−2006
2006−2007
2007−2008
2008−2009
2009−2010
2010−2011
2011−2012
2012−2013
2013−2014
2014−2015
2015−2016
2016−2017
2017−2018
2018−2019
2019−2020
2020−2021
2021−2022
2022−2023
2023−2024
52°N
50°N
48°N
46°N
100°W 90°W 80°W 70°W
Trend %/year
< −7 %
−7:−4 %
−4:−2 %
−2:−1 %
−1:−0.5 %
−0.5:0.5 %
0.5:1 %
1:2 %
2:4 %
4:7 %
> 7 %
NA

American Woodcock Trends across Canada, 1995−2024

243 Nocturnal Owl Survey routes with 3256 surveys and species observed during 58%
31 BBS routes with 506 surveys and species observed during 21%

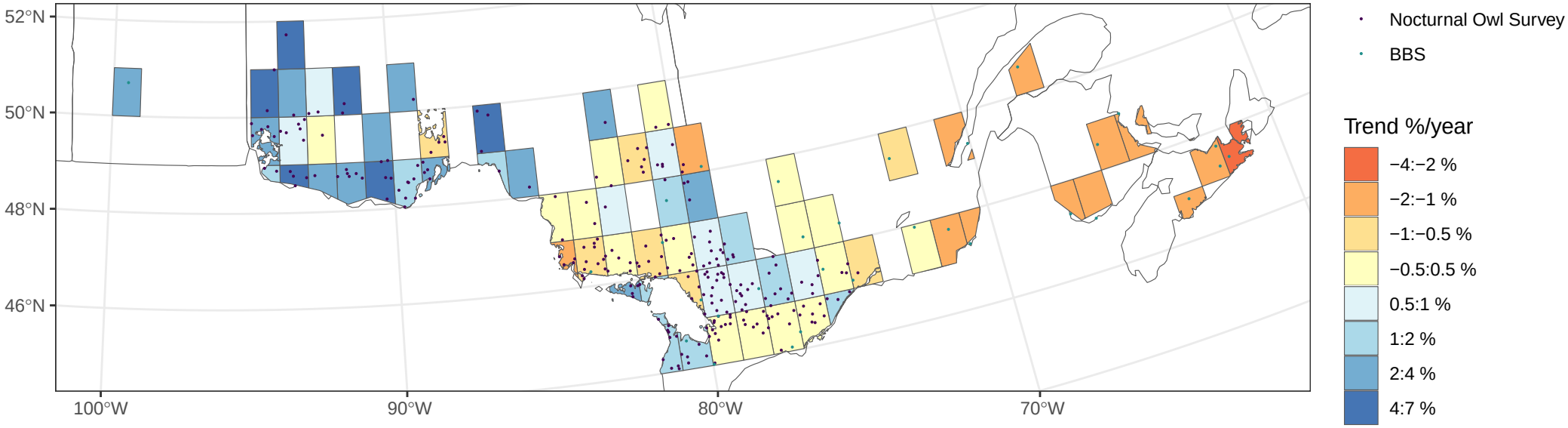

Population trends from an integrated analysis of data from Nocturnal Owl Surveys and BBS using a spatially explicit model to estimate annual changes in counts within grid cells and eBird seasonal relative abundance in 2023 to weight local changes based on relative population size.

American Woodcock Trends across Canada, 2010−2024

243 Nocturnal Owl Survey routes with 3256 surveys and species observed during 58%
31 BBS routes with 506 surveys and species observed during 21%

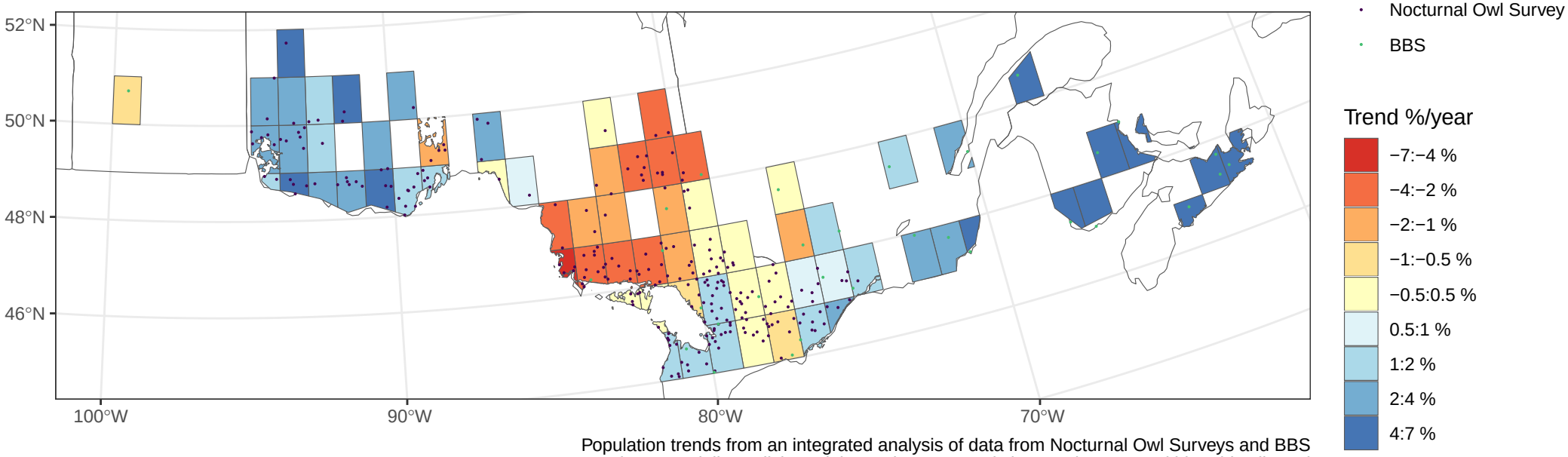

Population trends from an integrated analysis of data from Nocturnal Owl Surveys and BBS using a spatially explicit model to estimate annual changes in counts within grid cells and eBird seasonal relative abundance in 2023 to weight local changes based on relative population size.

American Woodcock Survey routes contributing to trends

243 Nocturnal Owl Survey routes with 3256 surveys and species observed during 58%
31 BBS routes with 506 surveys and species observed during 21%

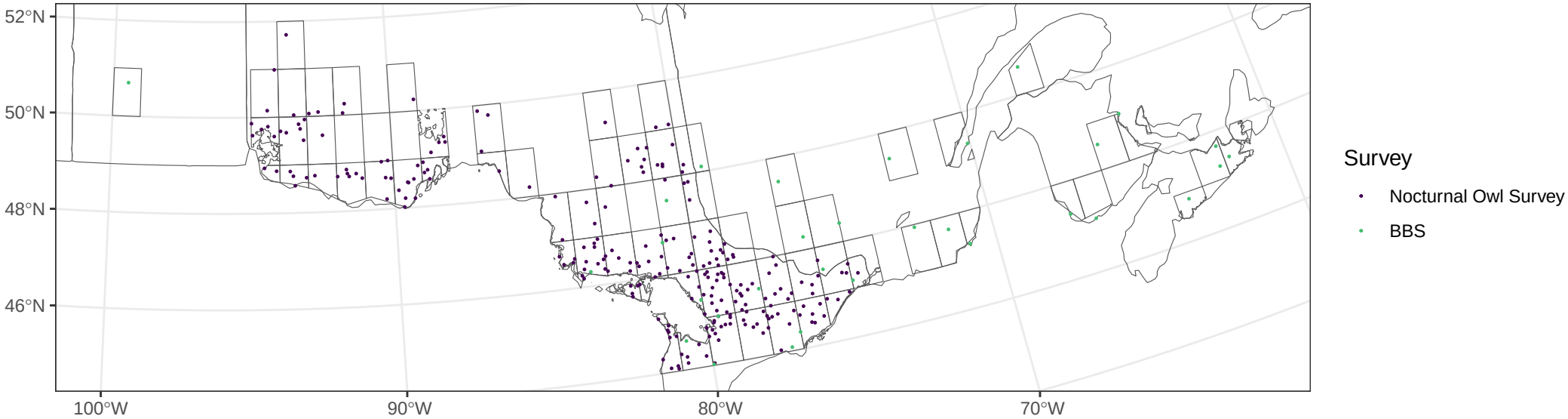

Population trends from an integrated analysis of data from Nocturnal Owl Surveys and BBS using a spatially explicit model to estimate annual changes in counts within grid cells and eBird seasonal relative abundance in 2023 to weight local changes based on relative population size.

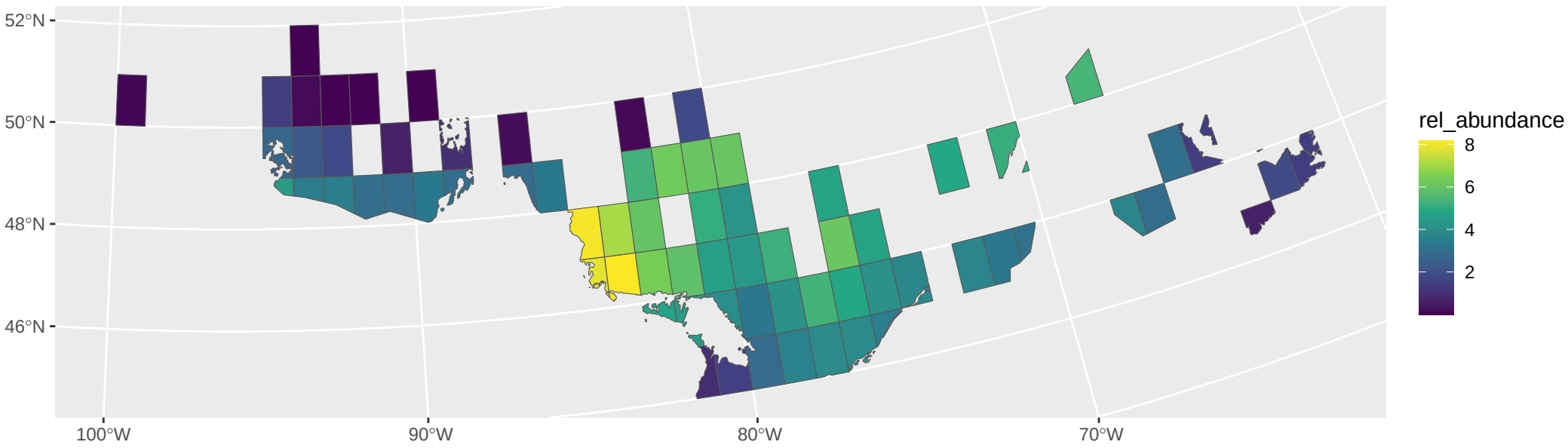
52°N
50°N
48°N
46°N
100°W
90°W
80°W
70°W
rel_abundance
8
6
4
2

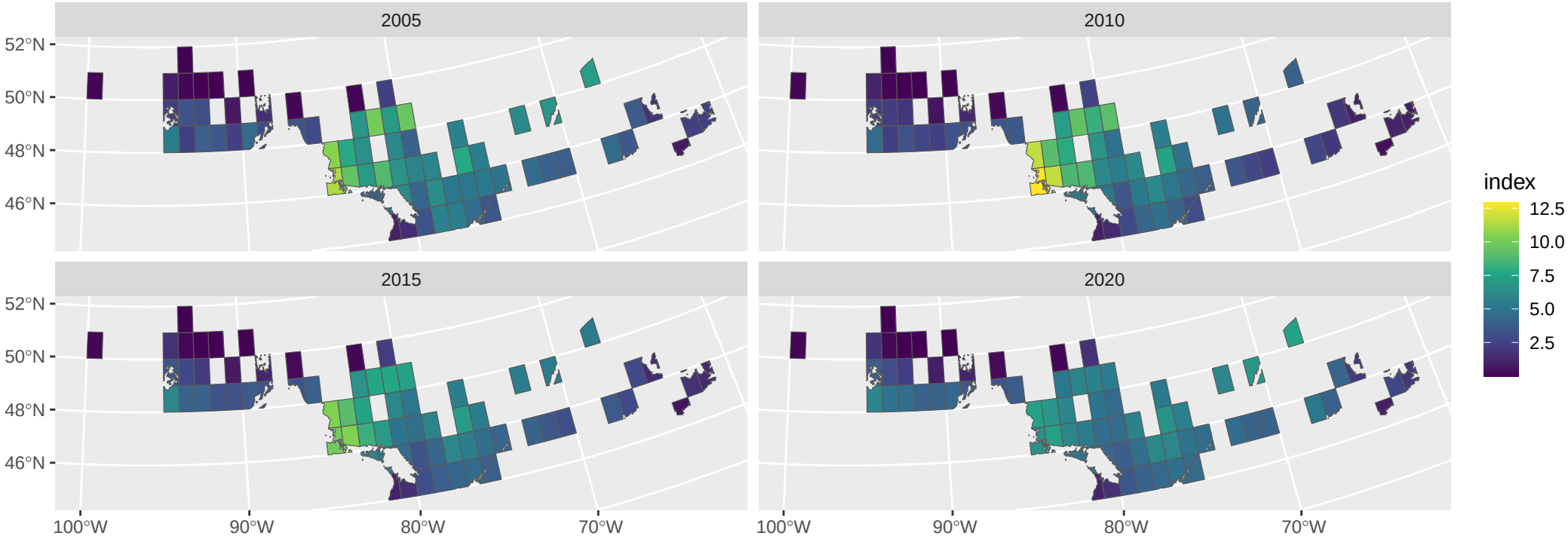
2005
2010
2015
2020
52°N
50°N
48°N
46°N
100°W
90°W
80°W
70°W
index
12.5
10.0
7.5
5.0
2.5

American Woodcock Population trajectory for Canada

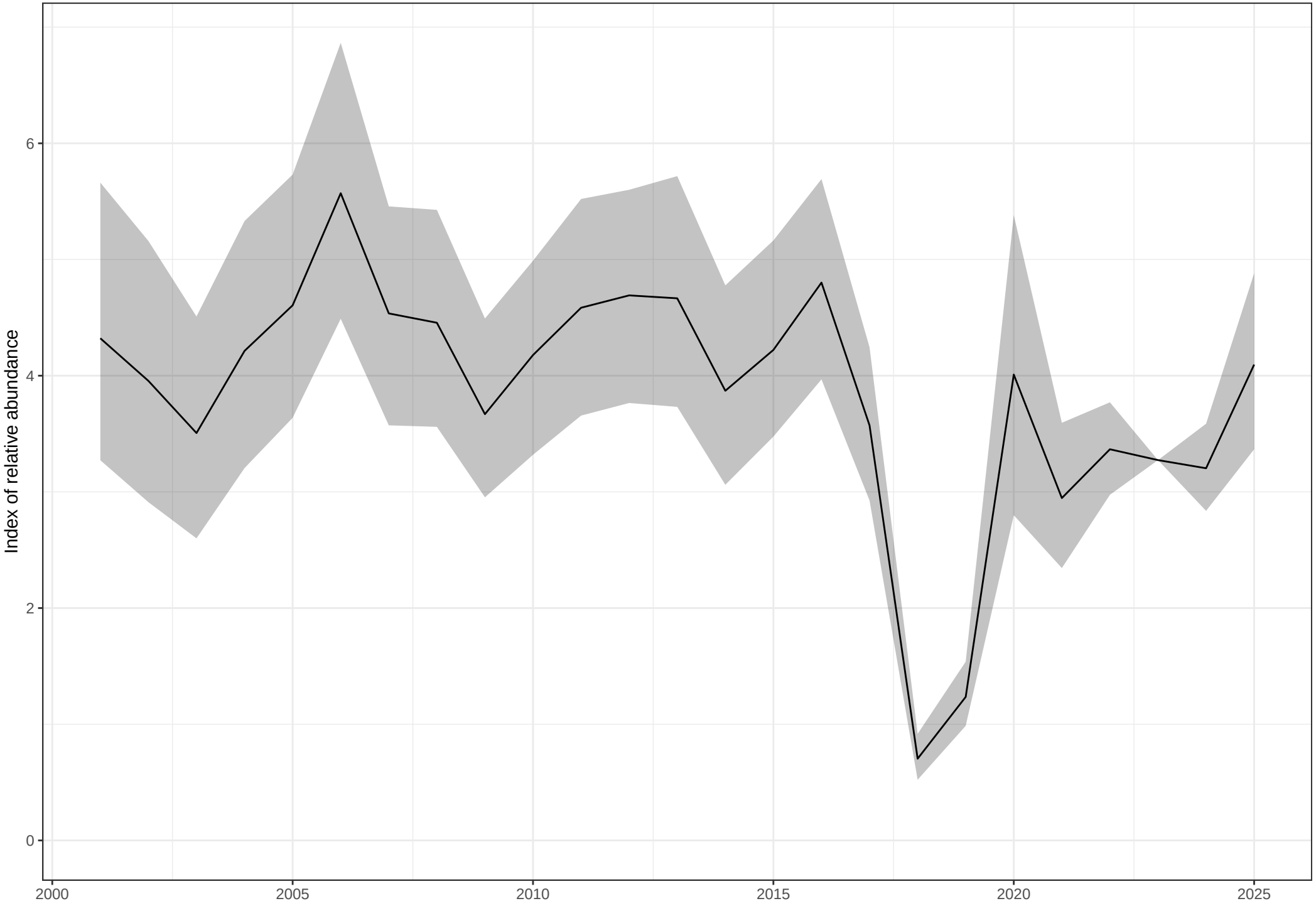

Population trajectory from an integrated analysis of data from Nocturnal Owl Surveys and BBS using a spatially explicit model to estimate annual changes in counts within grid cells and eBird seasonal relative abundance in 2023 to weight local changes based on relative population size.

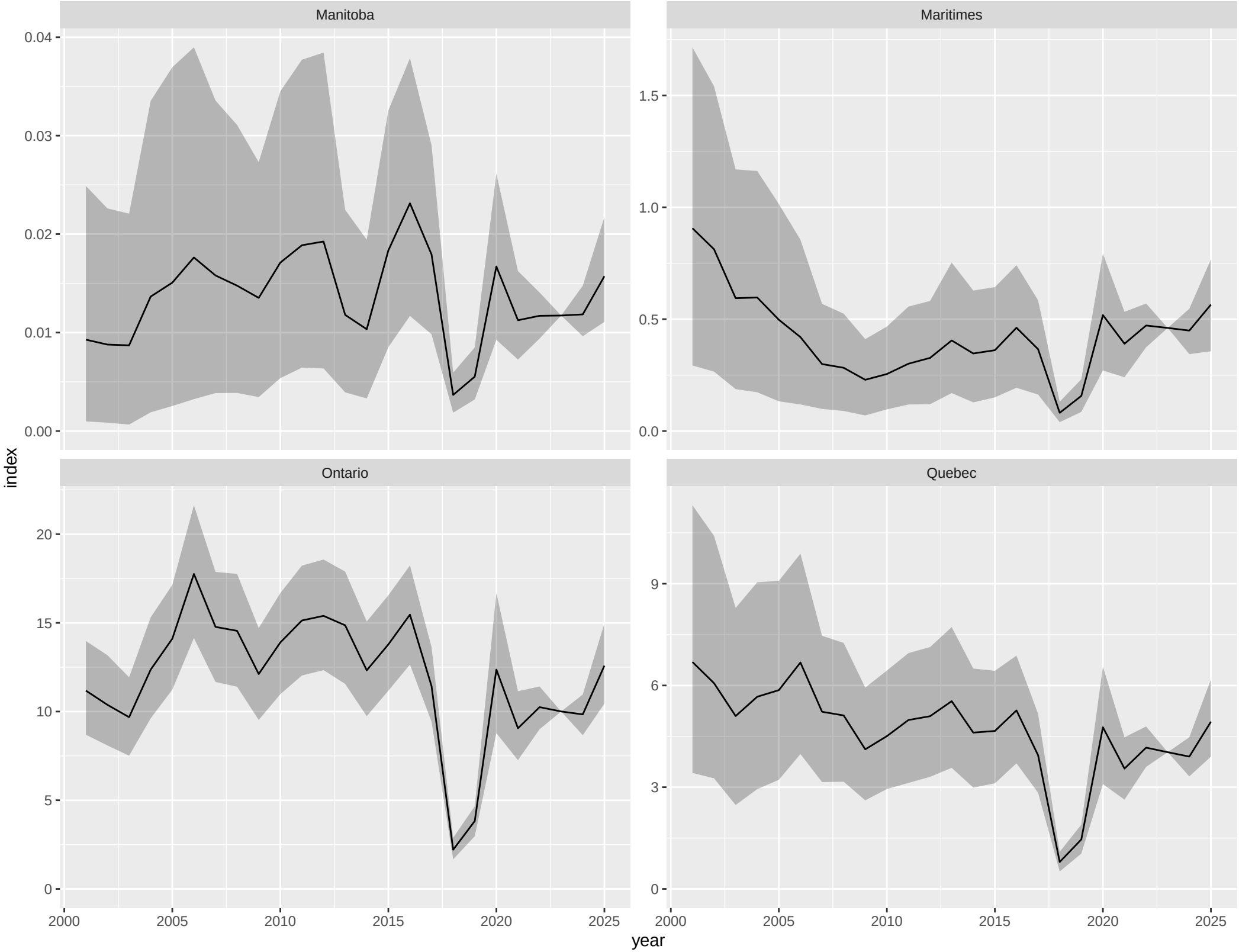
Manitoba
Maritimes
Ontario
Quebec
index
year
0.04
0.03
0.02
0.01
0.00
1.5
1.0
0.5
0.0
20
15
10
5
0
9
6
3
0
2000
2005
2010
2015
2020
2025

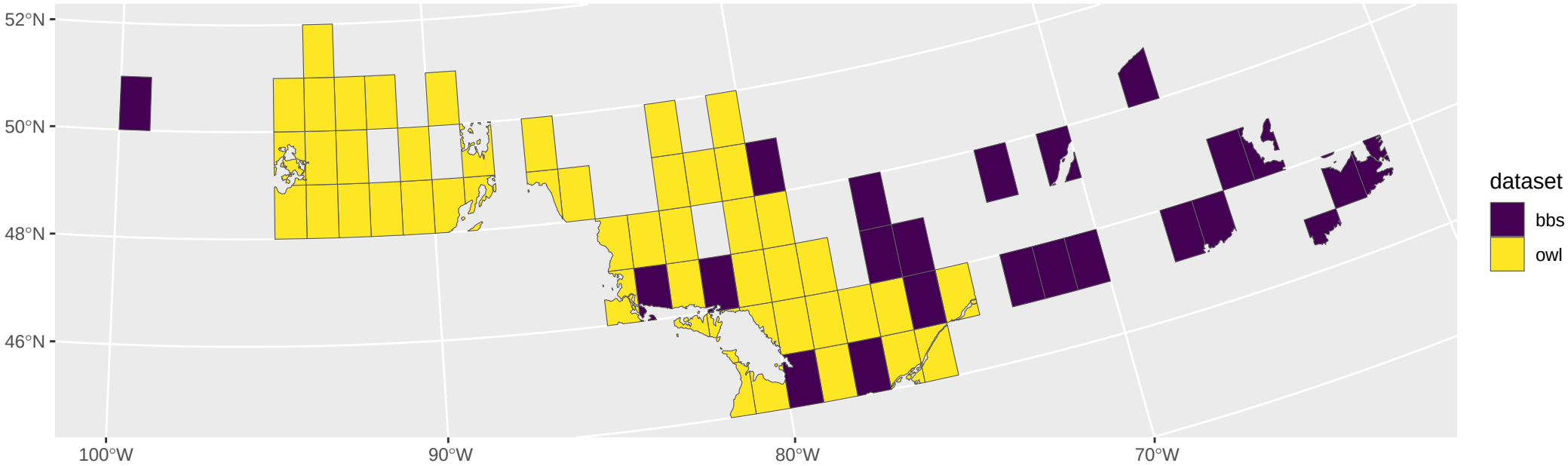
52°N
50°N
48°N
46°N
100°W
90°W
80°W
70°W
dataset
bbs
owl