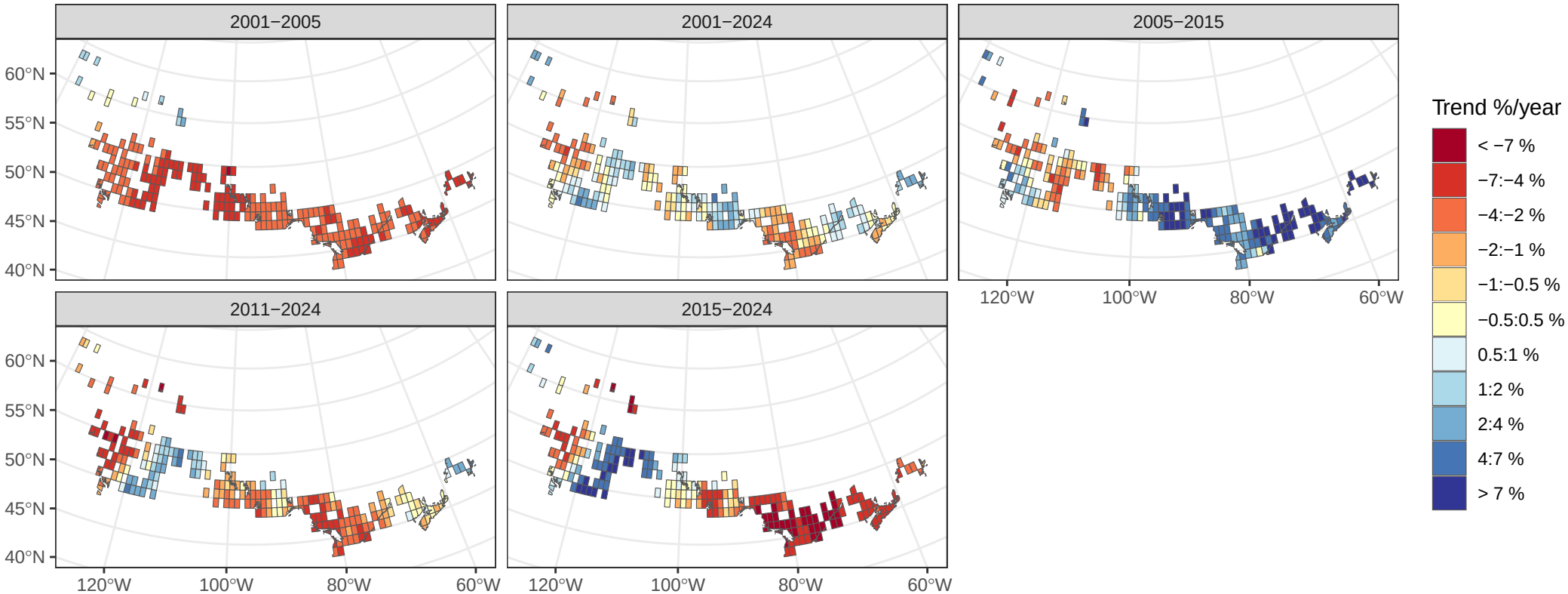
2001−2005
2001−2024
2005−2015
2011−2024
2015−2024
60°N
55°N
50°N
45°N
40°N
120°W
100°W
80°W
60°W
Trend %/year
< −7 %
−7:−4 %
−4:−2 %
−2:−1 %
−1:−0.5 %
−0.5:0.5 %
0.5:1 %
1:2 %
2:4 %
4:7 %
> 7 %

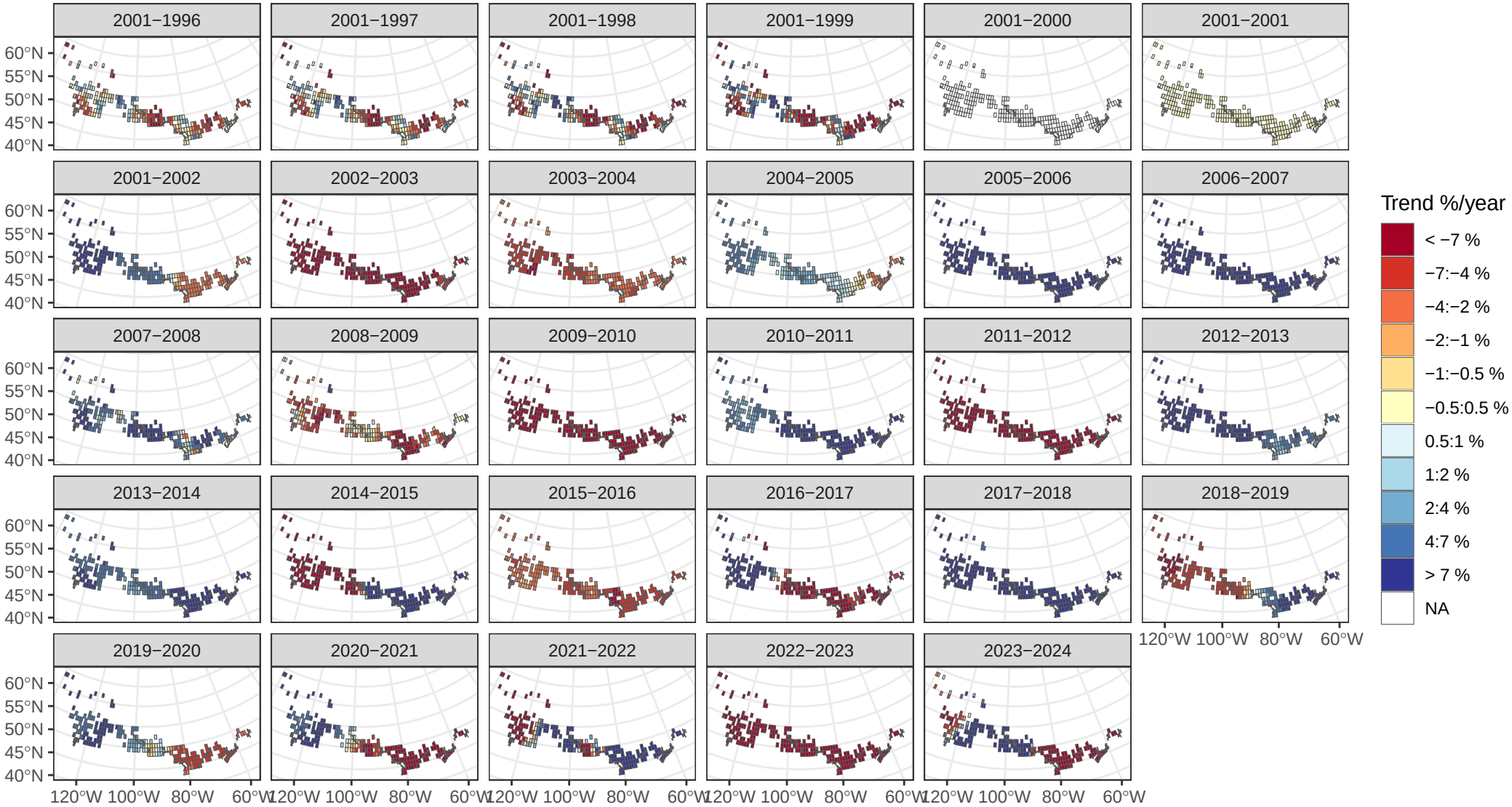
2001−1996
2001−1997
2001−1998
2001−1999
2001−2000
2001−2001
2001−2002
2002−2003
2003−2004
2004−2005
2005−2006
2006−2007
2007−2008
2008−2009
2009−2010
2010−2011
2011−2012
2012−2013
2013−2014
2014−2015
2015−2016
2016−2017
2017−2018
2018−2019
2019−2020
2020−2021
2021−2022
2022−2023
2023−2024
60°N
55°N
50°N
45°N
40°N
120°W 100°W 80°W 60°W
Trend %/year
< −7 %
−7:−4 %
−4:−2 %
−2:−1 %
−1:−0.5 %
−0.5:0.5 %
0.5:1 %
1:2 %
2:4 %
4:7 %
> 7 %
NA

Ruffed Grouse Trends across Canada, 1995−2024

187 Nocturnal Owl Survey routes with 2545 surveys and species observed during 32%
346 BBS routes with 4688 surveys and species observed during 35%

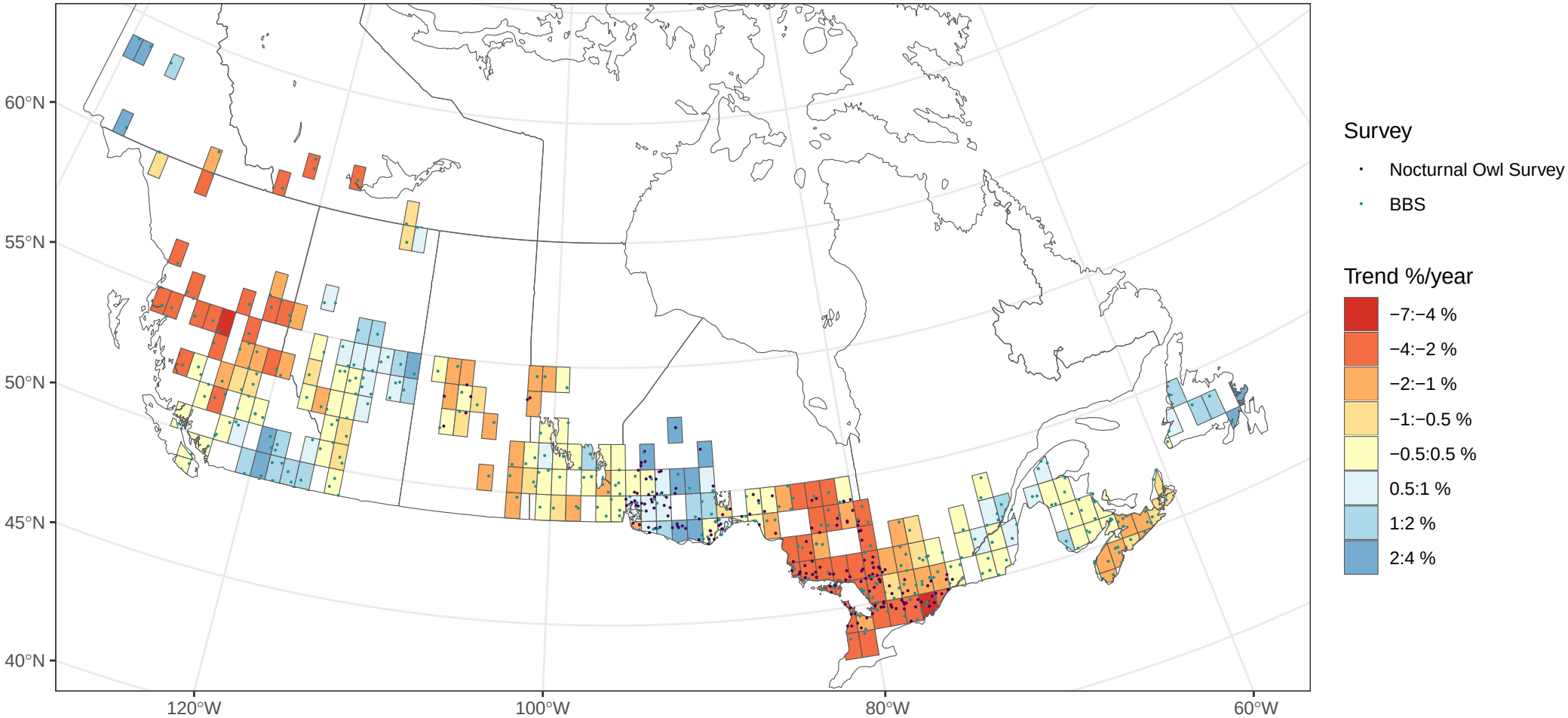

Population trends from an integrated analysis of data from Nocturnal Owl Surveys and BBS using a spatially explicit model to estimate annual changes in counts within grid cells and eBird seasonal relative abundance in 2023 to weight local changes based on relative population size.

Ruffed Grouse Trends across Canada, 2010−2024

187 Nocturnal Owl Survey routes with 2545 surveys and species observed during 32%
346 BBS routes with 4688 surveys and species observed during 35%

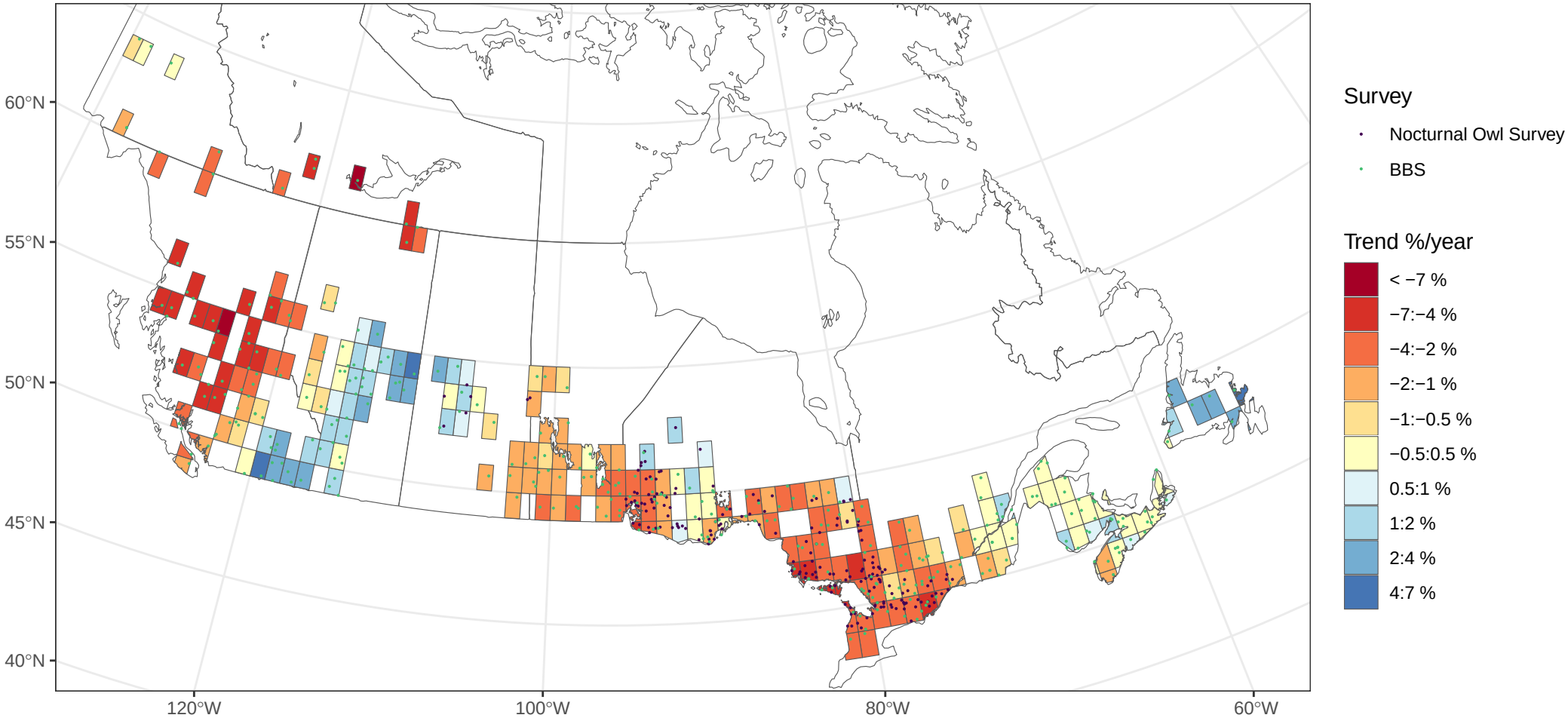

Population trends from an integrated analysis of data from Nocturnal Owl Surveys and BBS using a spatially explicit model to estimate annual changes in counts within grid cells and eBird seasonal relative abundance in 2023 to weight local changes based on relative population size.

Ruffed Grouse Survey routes contributing to trends

187 Nocturnal Owl Survey routes with 2545 surveys and species observed during 32%
346 BBS routes with 4688 surveys and species observed during 35%

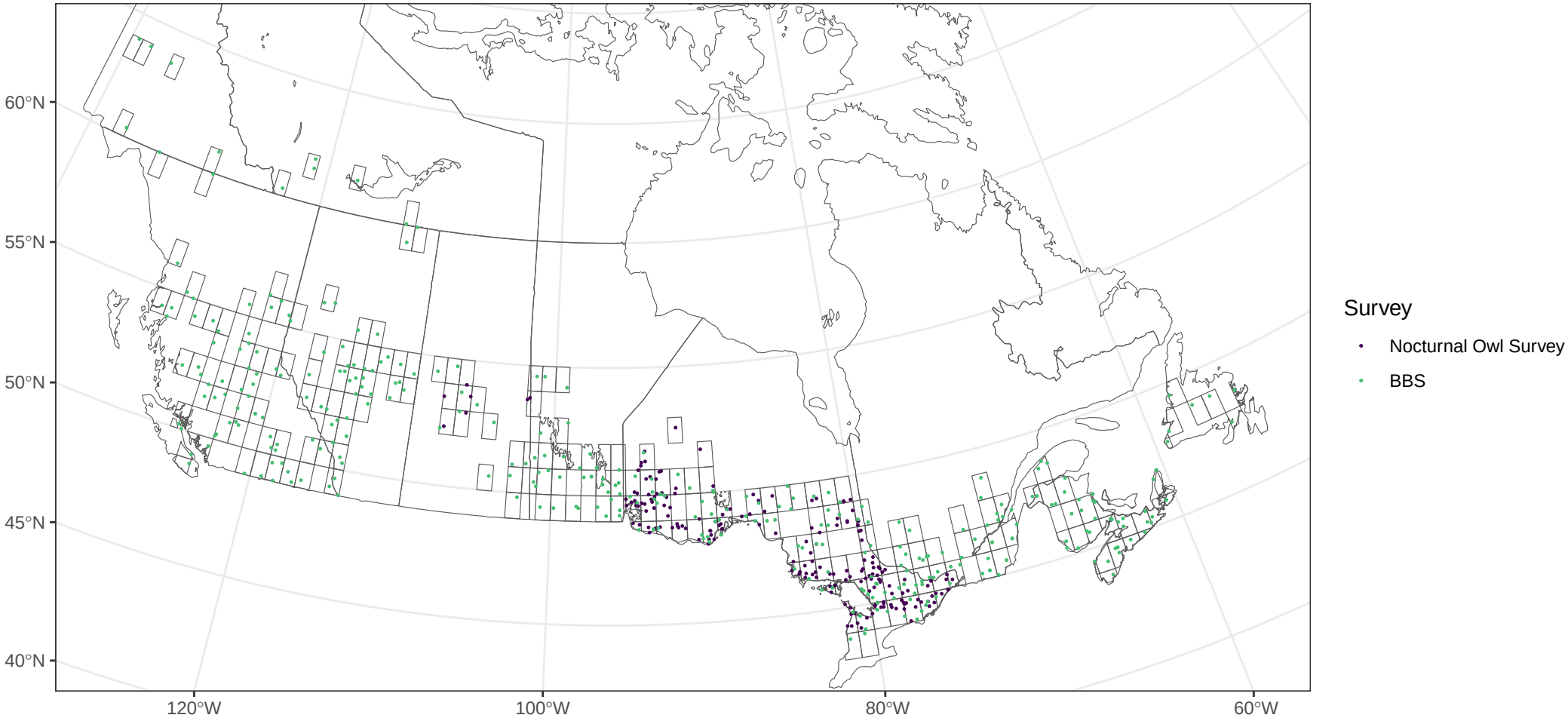

Population trends from an integrated analysis of data from Nocturnal Owl Surveys and BBS using a spatially explicit model to estimate annual changes in counts within grid cells and eBird seasonal relative abundance in 2023 to weight local changes based on relative population size.

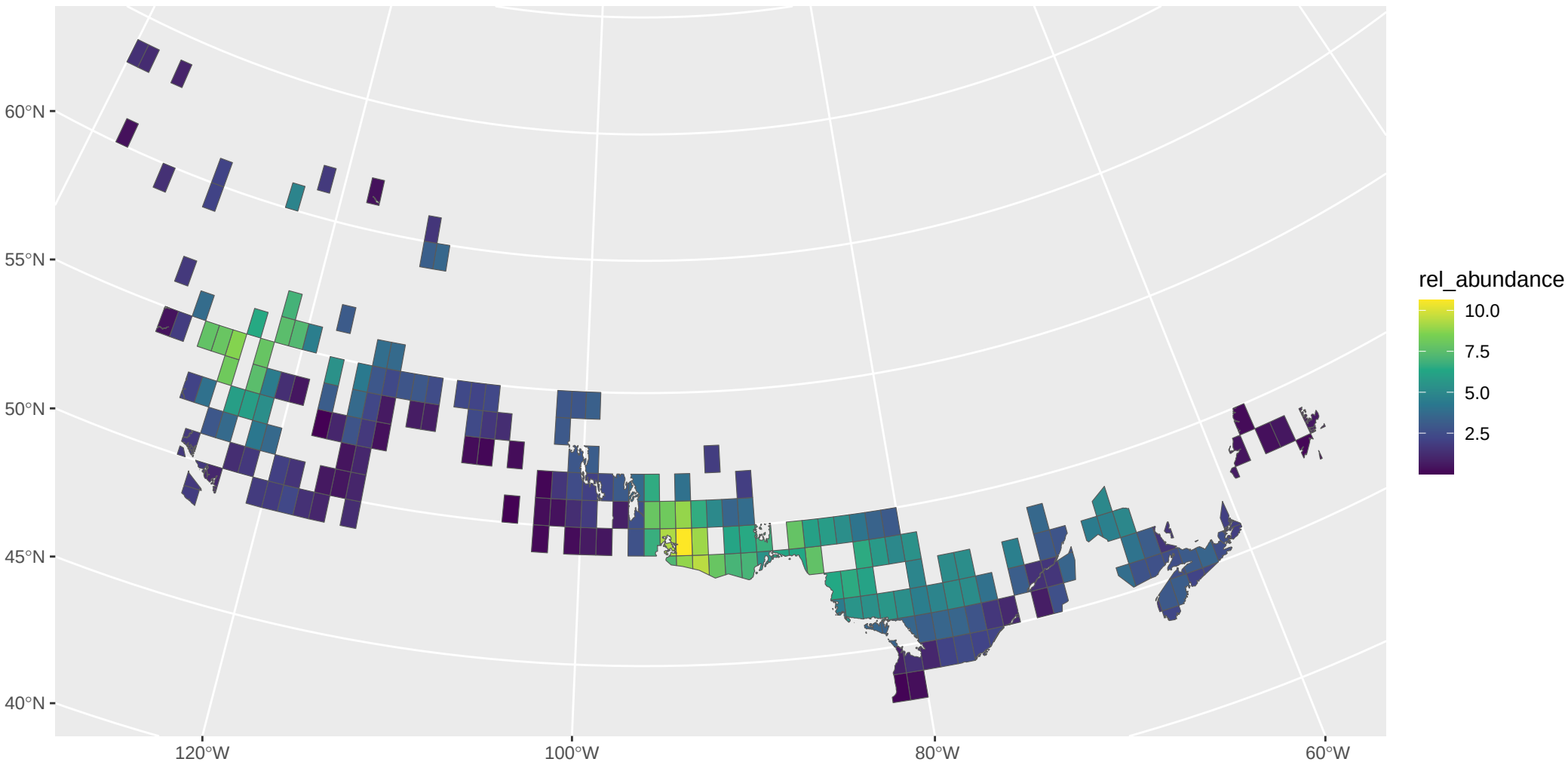
60°N
55°N
50°N
45°N
40°N
120°W
100°W
80°W
60°W
rel_abundance
10.0
7.5
5.0
2.5

2005
2010
2015
2020
60°N
55°N
50°N
45°N
40°N
120°W
100°W
80°W
60°W
index
10
5

Ruffed Grouse Population trajectory for Canada

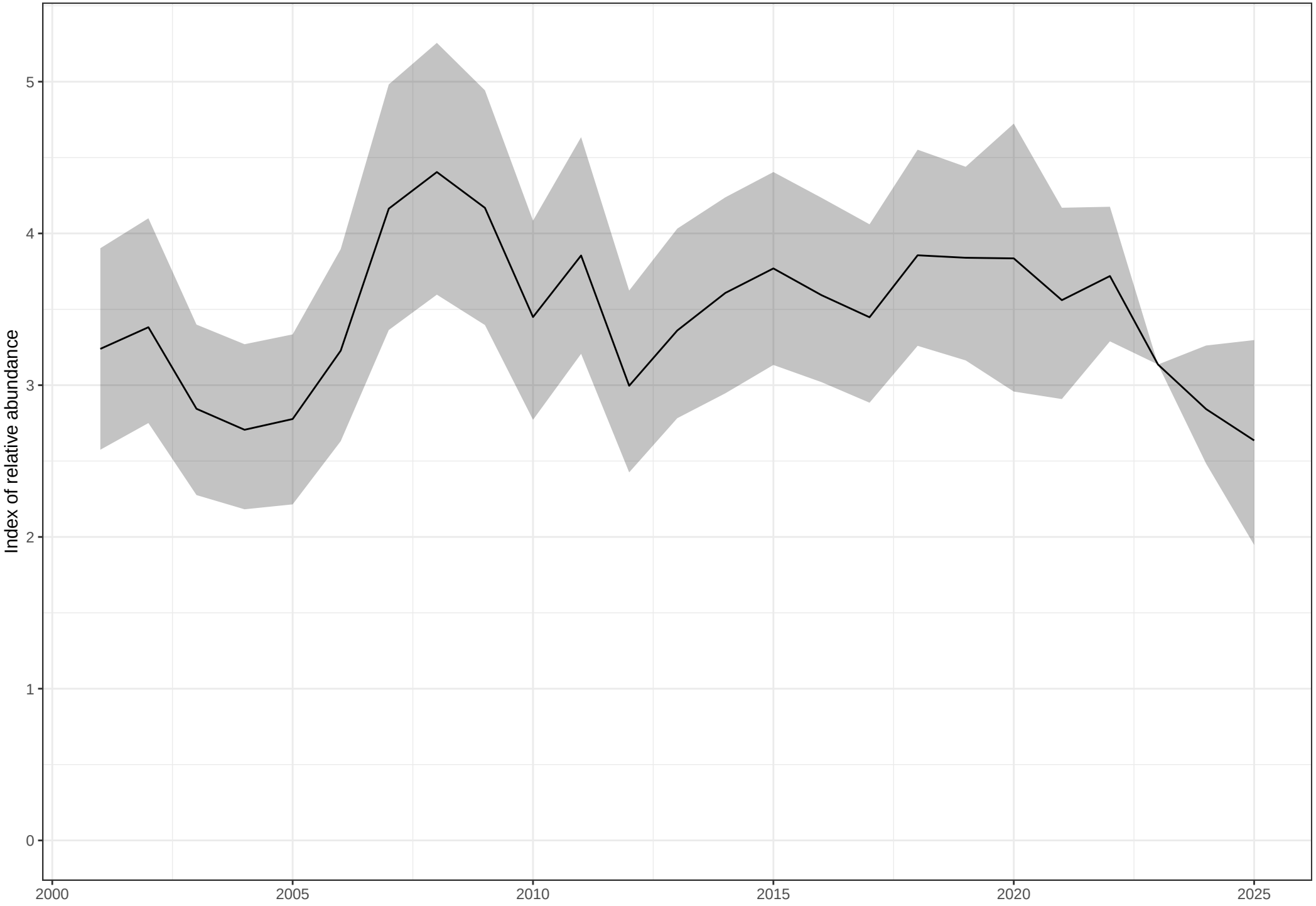

Population trajectory from an integrated analysis of data from Nocturnal Owl Surveys and BBS using a spatially explicit model to estimate annual changes in counts within grid cells and eBird seasonal relative abundance in 2023 to weight local changes based on relative population size.

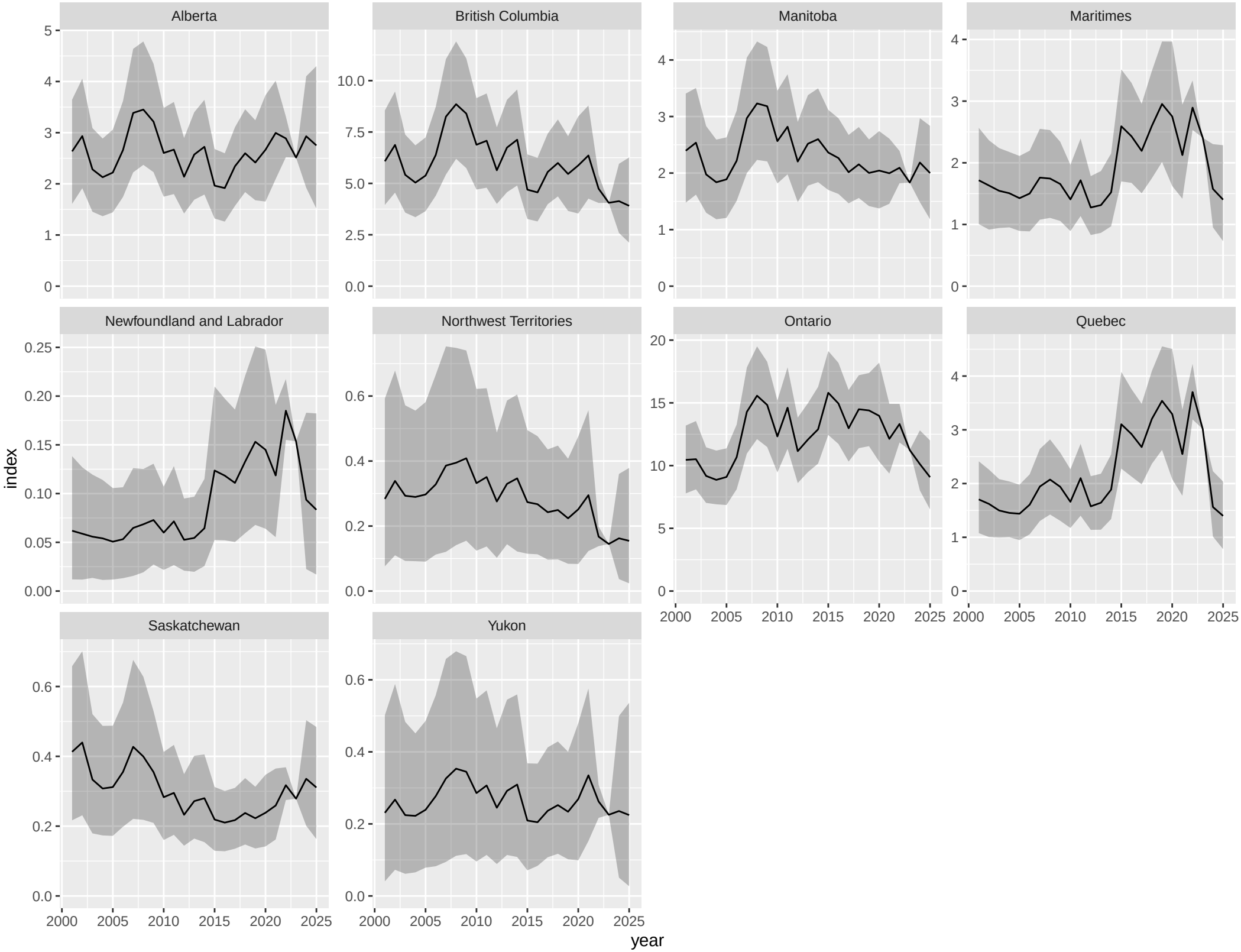
Alberta
British Columbia
Manitoba
Maritimes
Newfoundland and Labrador
Northwest Territories
Ontario
Quebec
Saskatchewan
Yukon
index
year
0
1
2
3
4
5
0.0
2.5
5.0
7.5
10.0
0.00
0.05
0.10
0.15
0.20
0.25
0.2
0.4
0.6
5
10
15
20
2000
2005
2010
2015
2020
2025

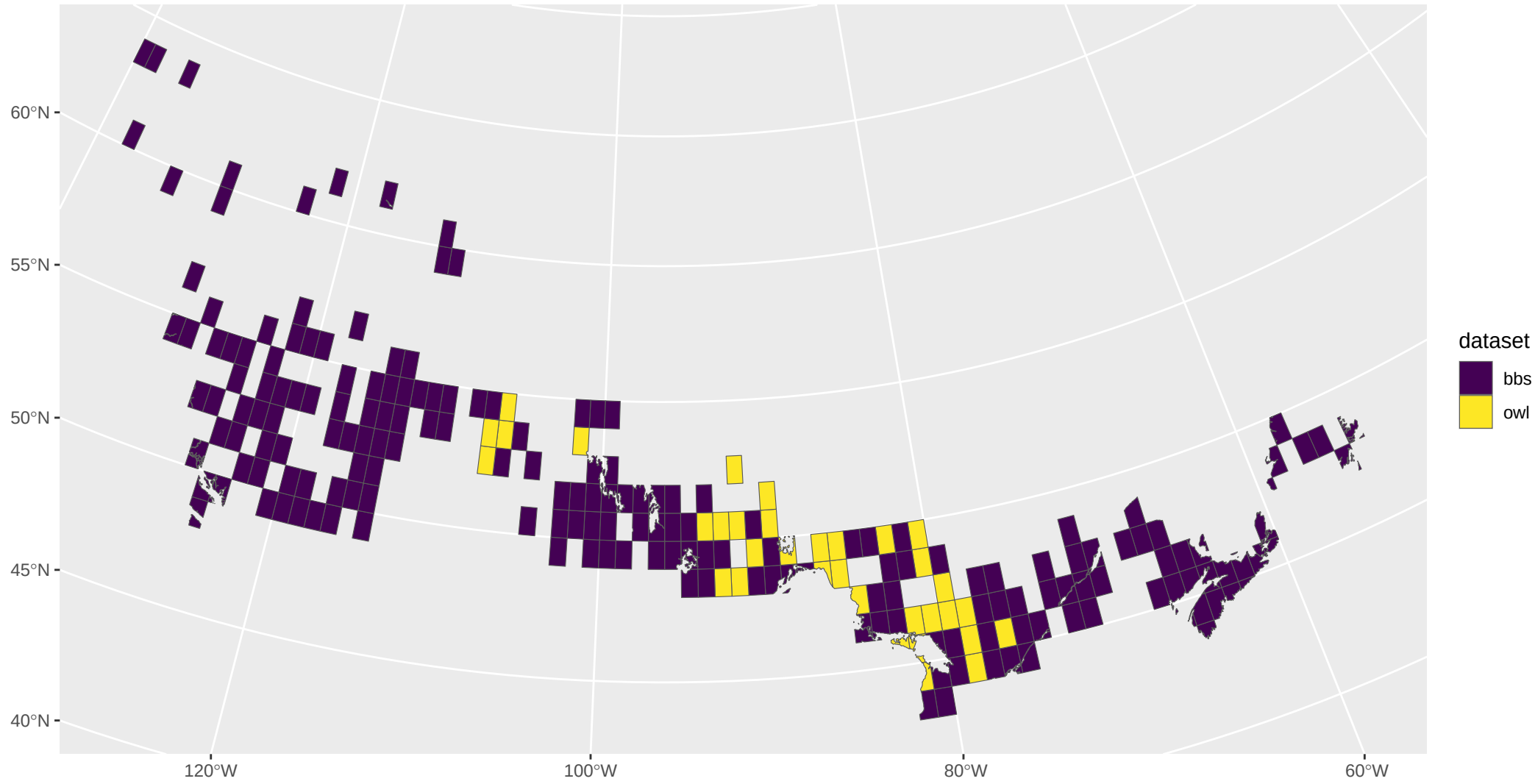
60°N
55°N
50°N
45°N
40°N
120°W
100°W
80°W
60°W
dataset
bbs
owl