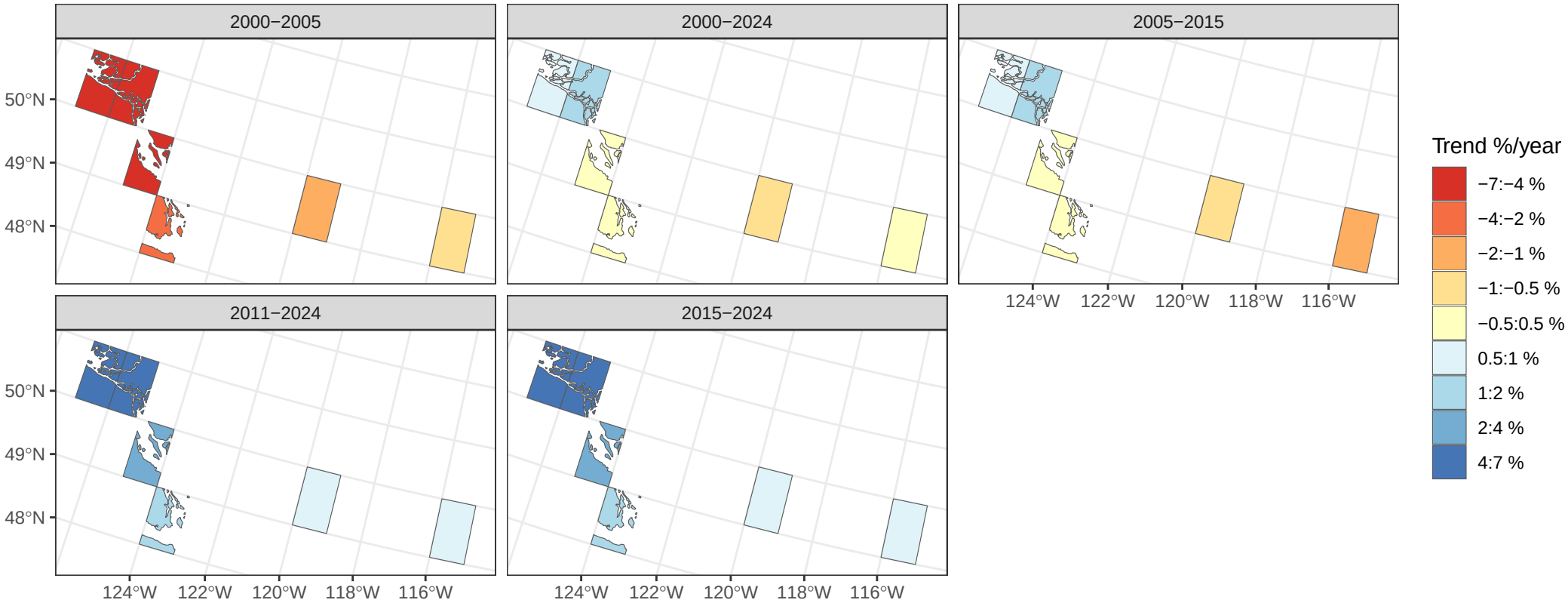
2000−2005
2000−2024
2005−2015
2011−2024
2015−2024
50°N
49°N
48°N
124°W
122°W
120°W
118°W
116°W
Trend %/year
−7:−4 %
−4:−2 %
−2:−1 %
−1:−0.5 %
−0.5:0.5 %
0.5:1 %
1:2 %
2:4 %
4:7 %

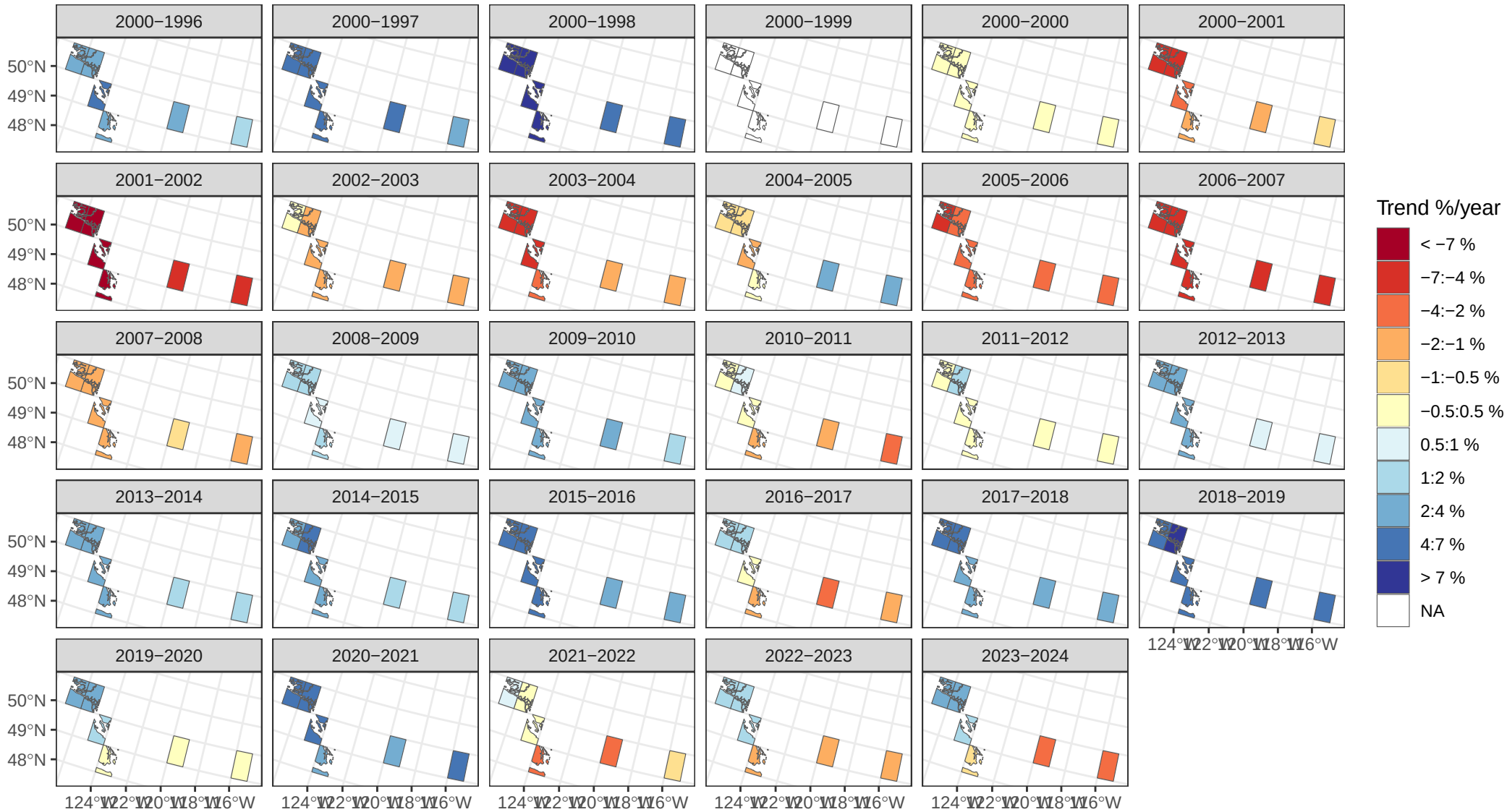
2000−1996
2000−1997
2000−1998
2000−1999
2000−2000
2000−2001
2001−2002
2002−2003
2003−2004
2004−2005
2005−2006
2006−2007
2007−2008
2008−2009
2009−2010
2010−2011
2011−2012
2012−2013
2013−2014
2014−2015
2015−2016
2016−2017
2017−2018
2018−2019
2019−2020
2020−2021
2021−2022
2022−2023
2023−2024
50°N
49°N
48°N
124°W
122°W
120°W
118°W
116°W
Trend %/year
< −7 %
−7:−4 %
−4:−2 %
−2:−1 %
−1:−0.5 %
−0.5:0.5 %
0.5:1 %
1:2 %
2:4 %
4:7 %
> 7 %
NA

Western Screech−Owl Trends across Canada, 1995−2024

22 Nocturnal Owl Survey routes with 297 surveys and species observed during 31%
0 BBS routes with 0 surveys and species observed during NA%

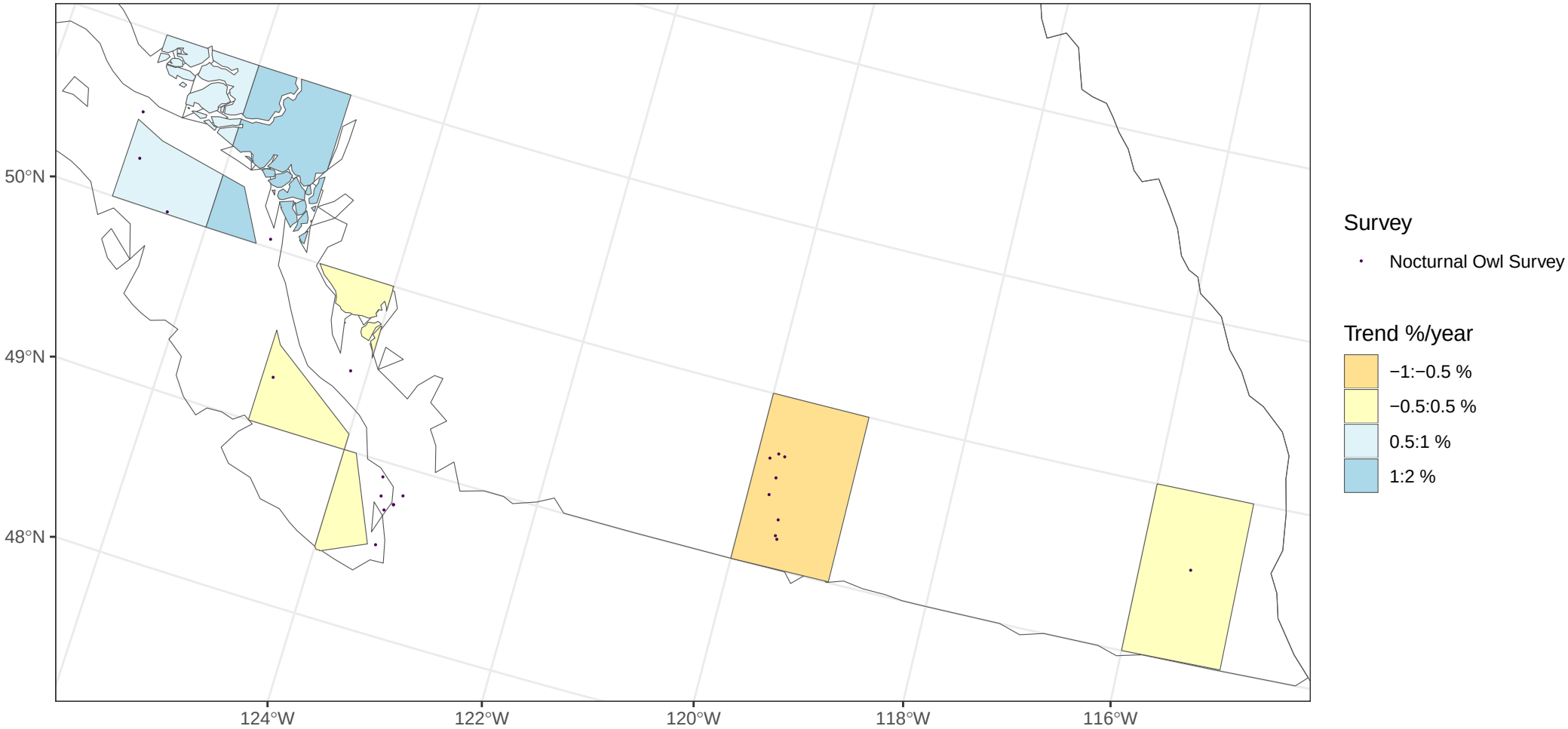

Population trends from an integrated analysis of data from Nocturnal Owl Surveys and BBS using a spatially explicit model to estimate annual changes in counts within grid cells and eBird seasonal relative abundance in 2023 to weight local changes based on relative population size.

Western Screech−Owl Trends across Canada, 2010−2024

22 Nocturnal Owl Survey routes with 297 surveys and species observed during 31%
0 BBS routes with 0 surveys and species observed during NA%

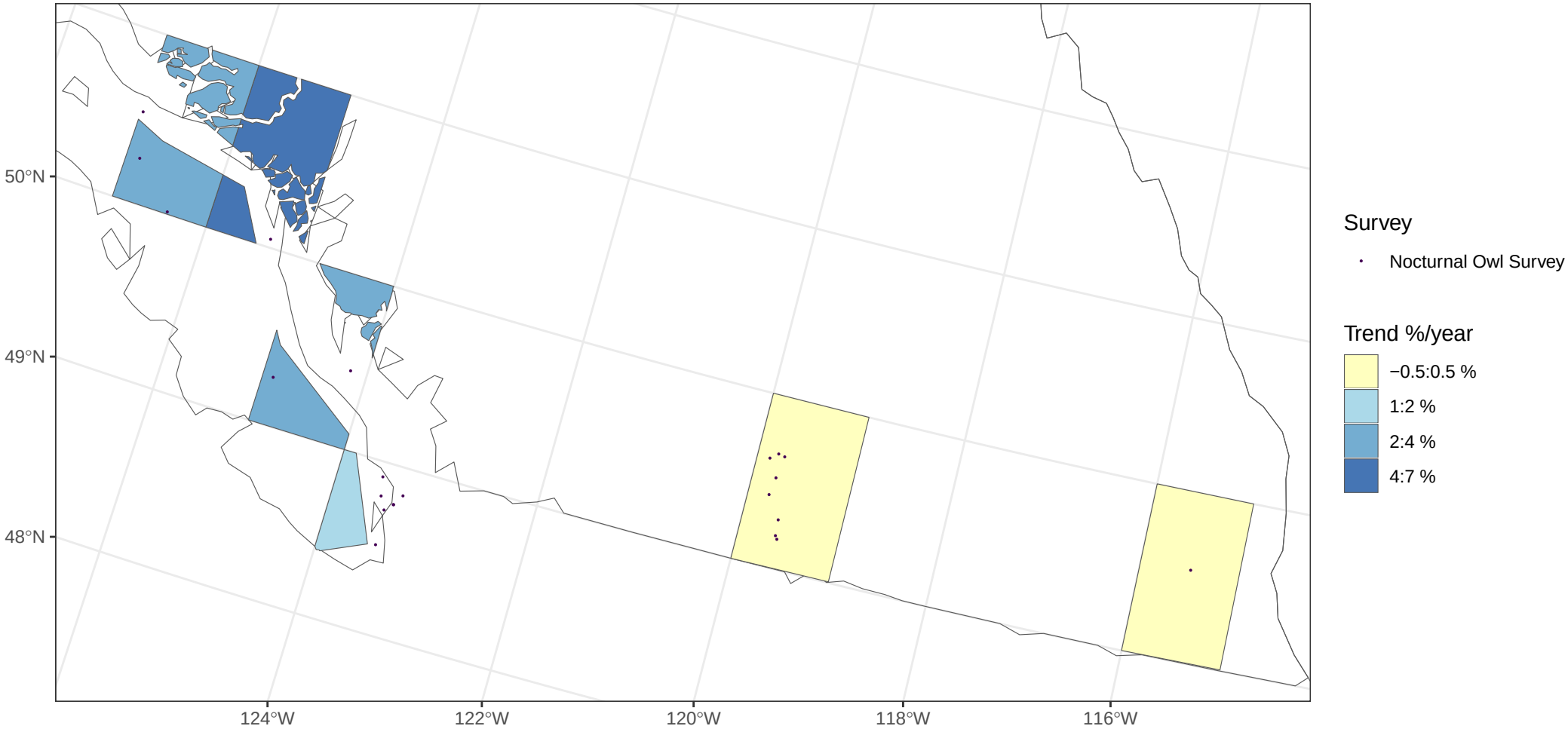

Population trends from an integrated analysis of data from Nocturnal Owl Surveys and BBS using a spatially explicit model to estimate annual changes in counts within grid cells and eBird seasonal relative abundance in 2023 to weight local changes based on relative population size.

Western Screech−Owl Survey routes contributing to trends

22 Nocturnal Owl Survey routes with 297 surveys and species observed during 31%
0 BBS routes with 0 surveys and species observed during NA%

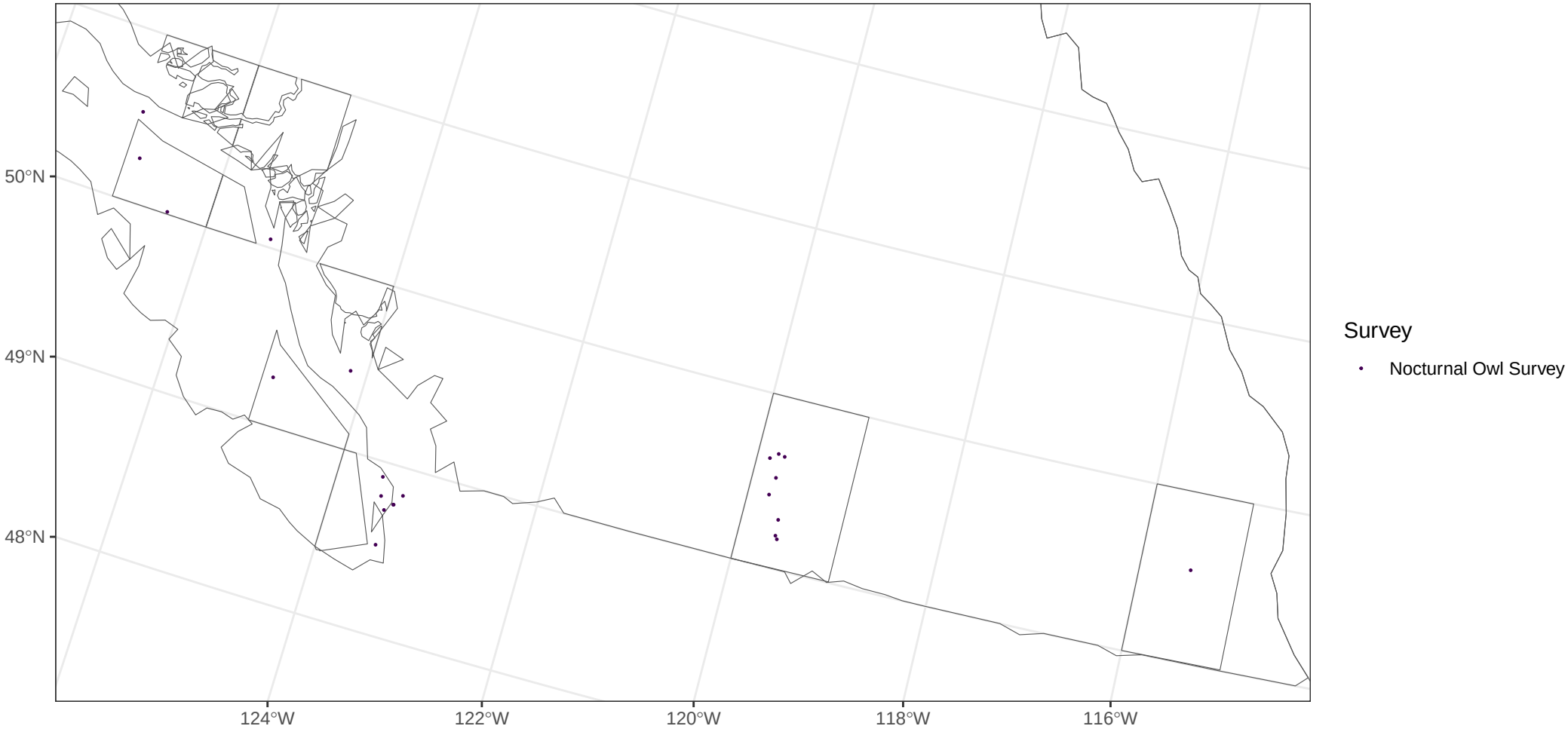

Population trends from an integrated analysis of data from Nocturnal Owl Surveys and BBS using a spatially explicit model to estimate annual changes in counts within grid cells and eBird seasonal relative abundance in 2023 to weight local changes based on relative population size.

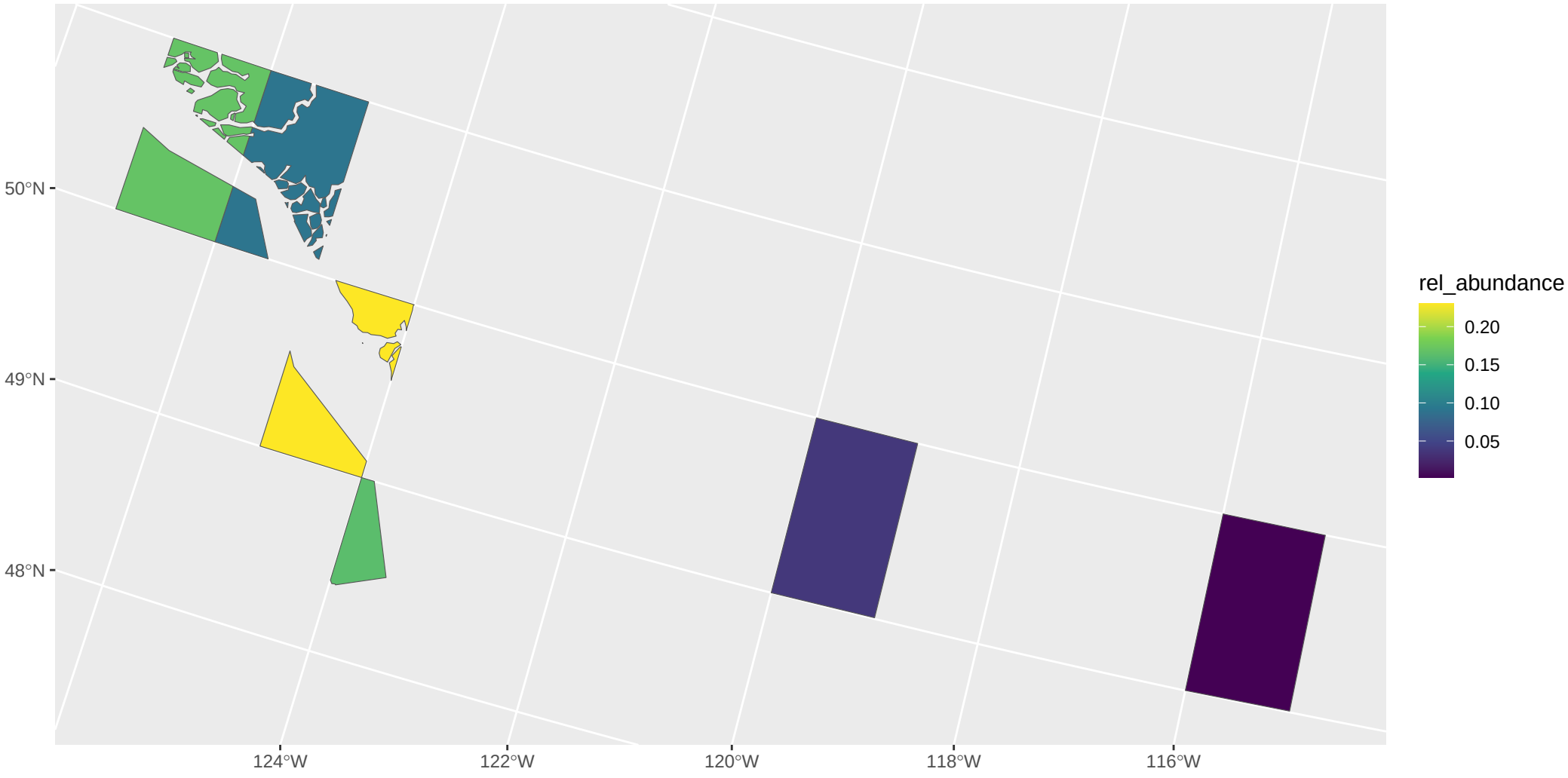
50°N
49°N
48°N
124°W
122°W
120°W
118°W
116°W
rel_abundance
0.20
0.15
0.10
0.05

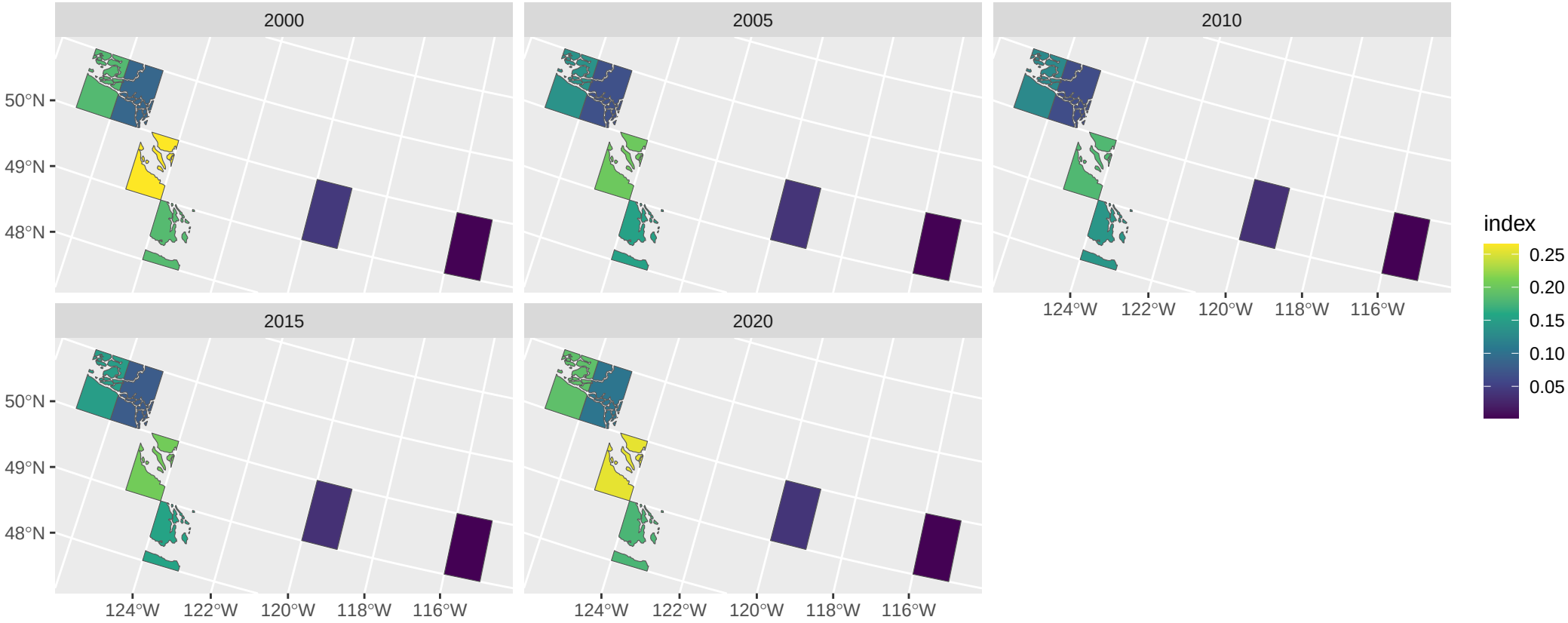
2000
2005
2010
2015
2020
50°N
49°N
48°N
124°W
122°W
120°W
118°W
116°W
index
0.25
0.20
0.15
0.10
0.05

Western Screech−Owl Population trajectory for Canada

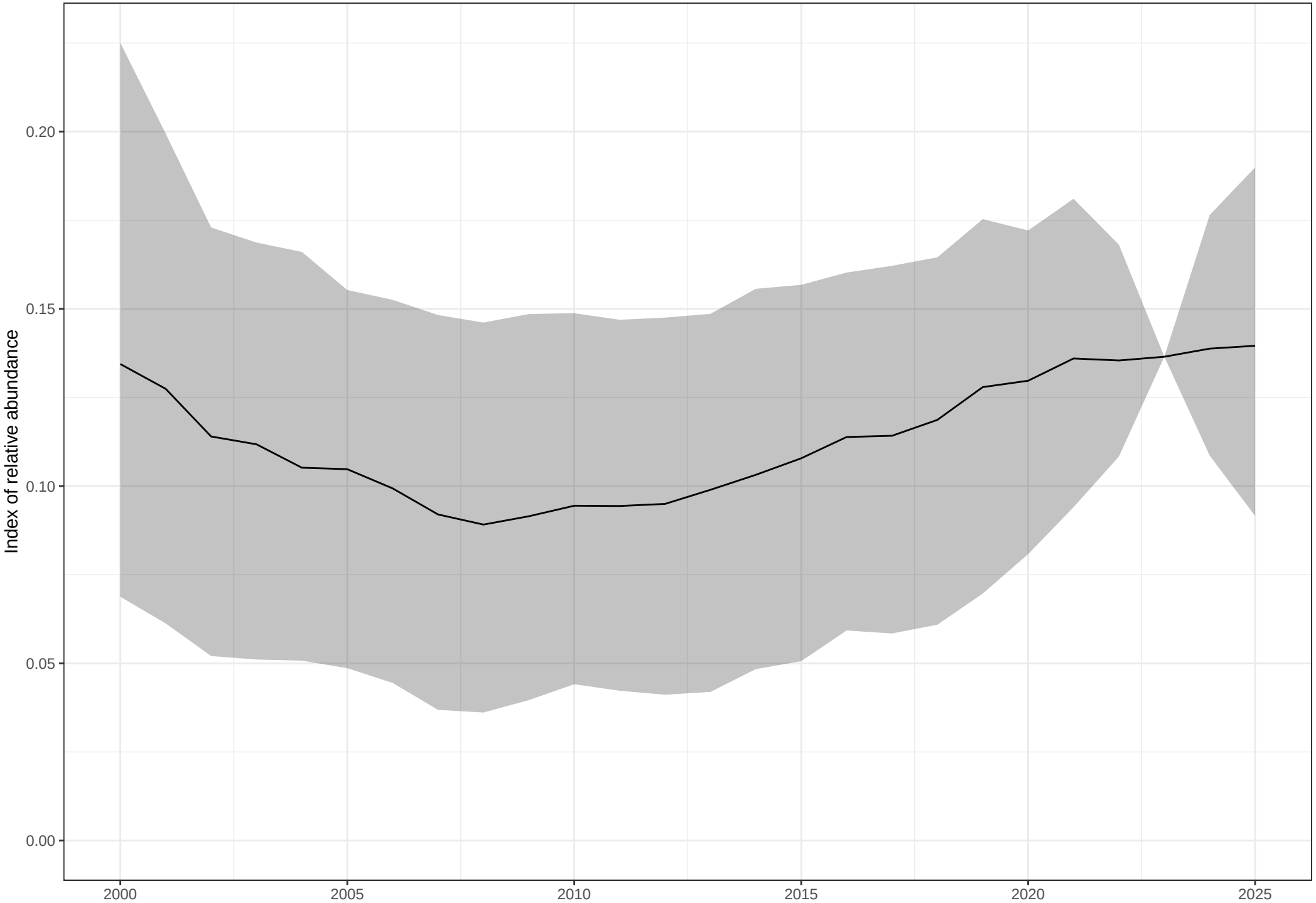

Population trajectory from an integrated analysis of data from Nocturnal Owl Surveys and BBS
using a spatially explicit model to estimate annual changes in counts within grid cells and
eBird seasonal relative abundance in 2023 to weight local changes based on relative population size.

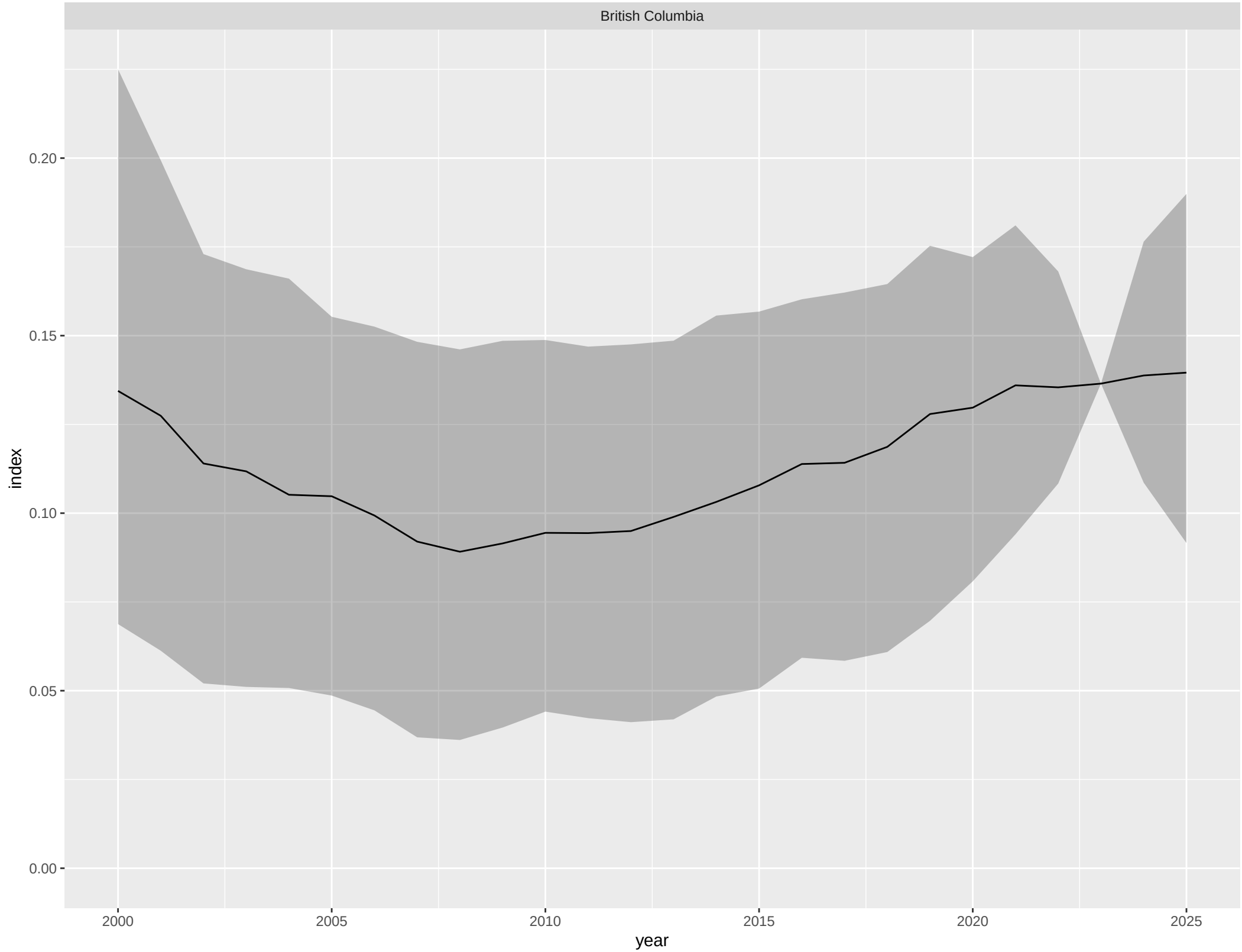
British Columbia
0.20
0.15
0.10
0.05
0.00
index
2000
2005
2010
2015
2020
2025
year

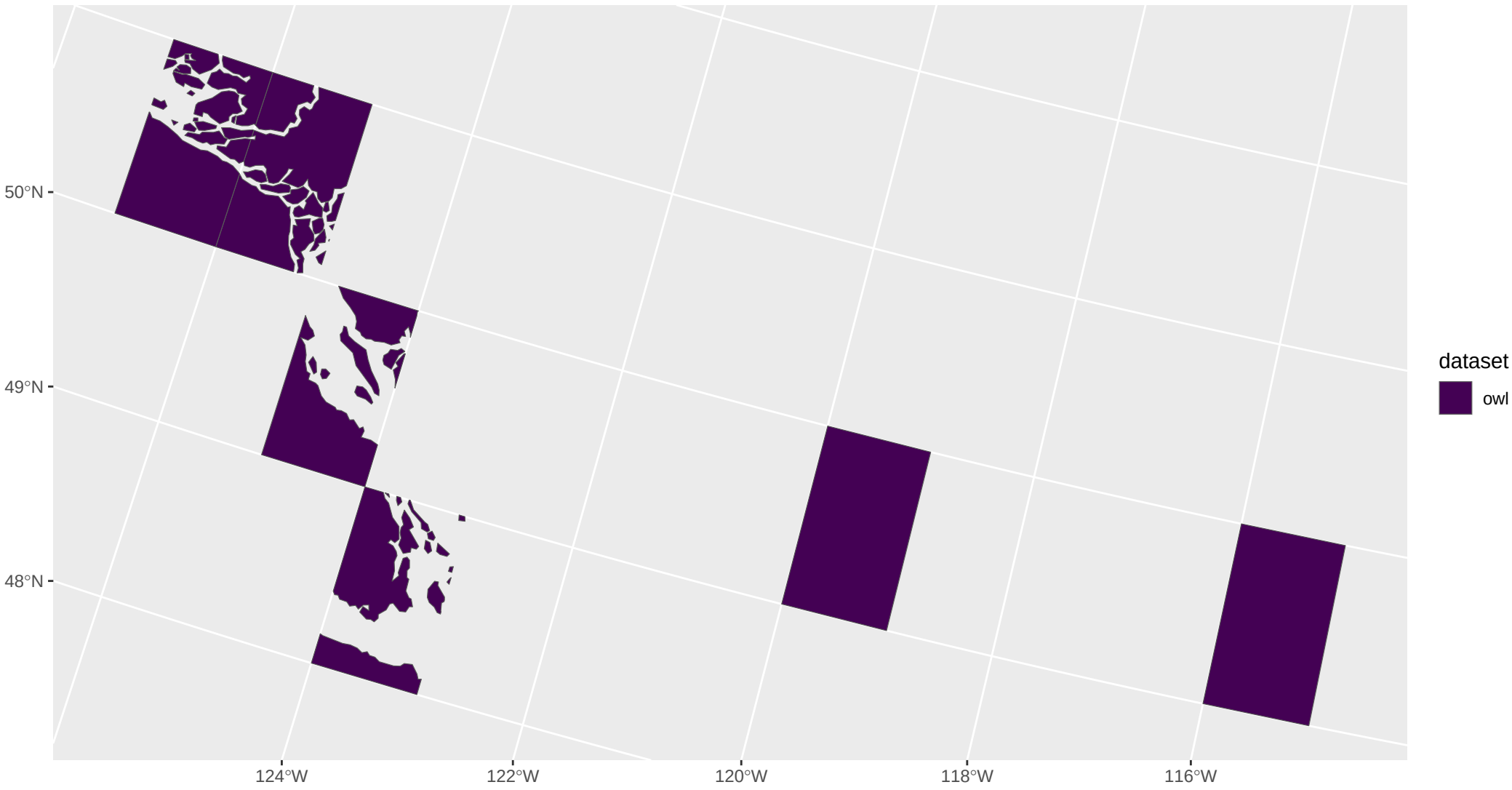
50°N
49°N
48°N
124°W
122°W
120°W
118°W
116°W
dataset
owl