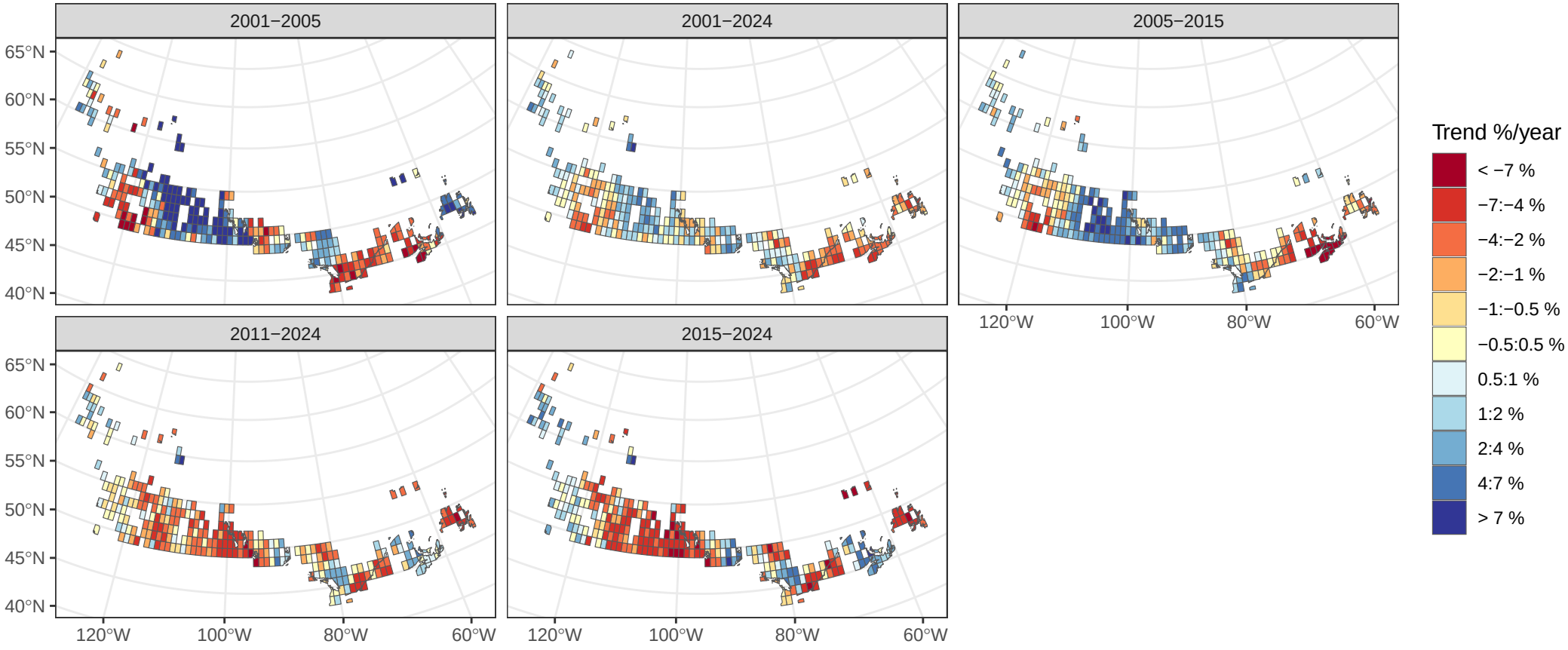
2001−2005
2001−2024
2005−2015
2011−2024
2015−2024
65°N
60°N
55°N
50°N
45°N
40°N
120°W
100°W
80°W
60°W
Trend %/year
< −7 %
−7:−4 %
−4:−2 %
−2:−1 %
−1:−0.5 %
−0.5:0.5 %
0.5:1 %
1:2 %
2:4 %
4:7 %
> 7 %

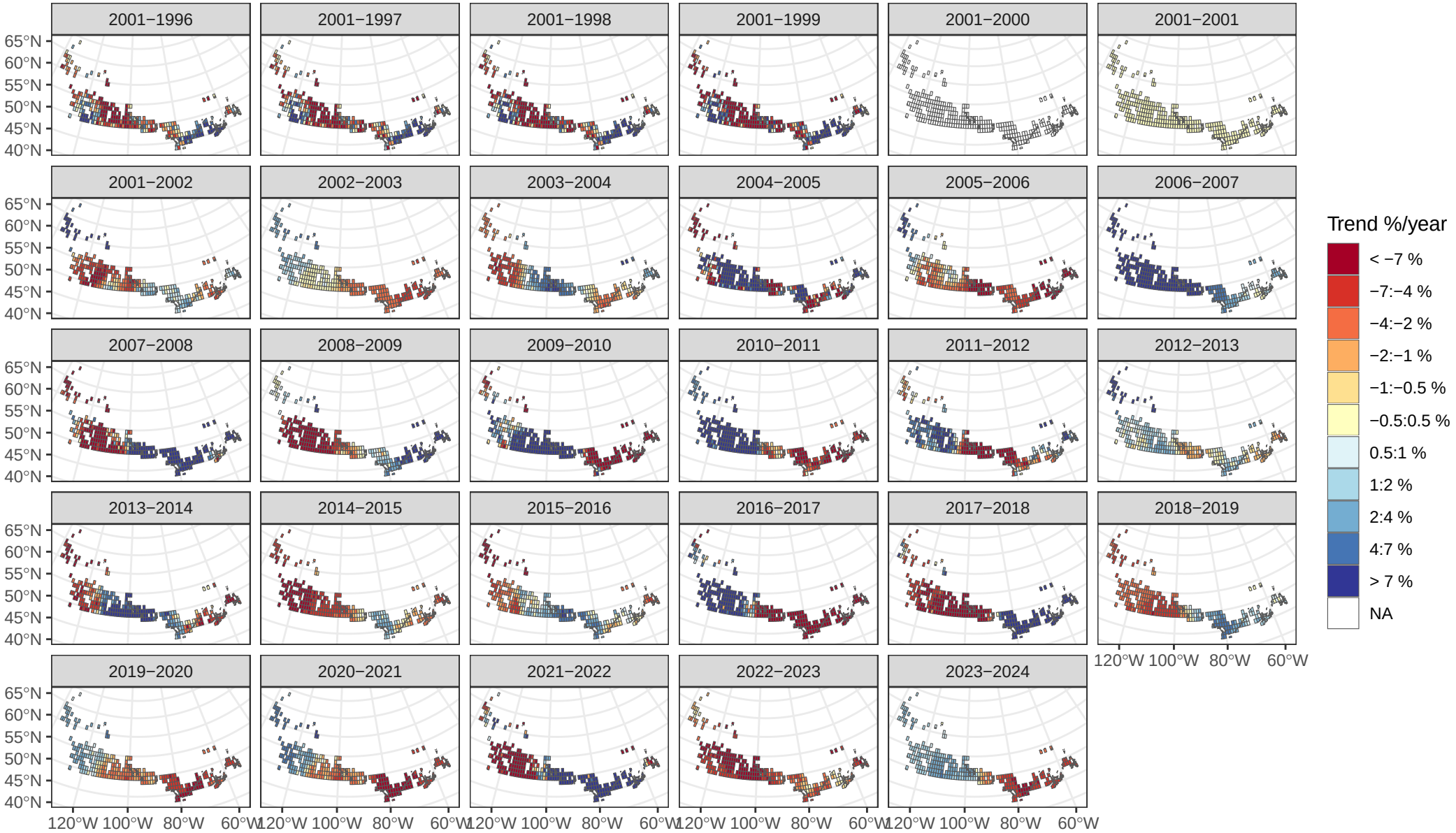
2001−1996
2001−1997
2001−1998
2001−1999
2001−2000
2001−2001
2001−2002
2002−2003
2003−2004
2004−2005
2005−2006
2006−2007
2007−2008
2008−2009
2009−2010
2010−2011
2011−2012
2012−2013
2013−2014
2014−2015
2015−2016
2016−2017
2017−2018
2018−2019
2019−2020
2020−2021
2021−2022
2022−2023
2023−2024
65°N
60°N
55°N
50°N
45°N
40°N
120°W 100°W 80°W 60°W
Trend %/year
< −7 %
−7:−4 %
−4:−2 %
−2:−1 %
−1:−0.5 %
−0.5:0.5 %
0.5:1 %
1:2 %
2:4 %
4:7 %
> 7 %
NA

Wilson's Snipe Trends across Canada, 1995−2024

173 Nocturnal Owl Survey routes with 2437 surveys and species observed during 37%
647 BBS routes with 8329 surveys and species observed during 74%

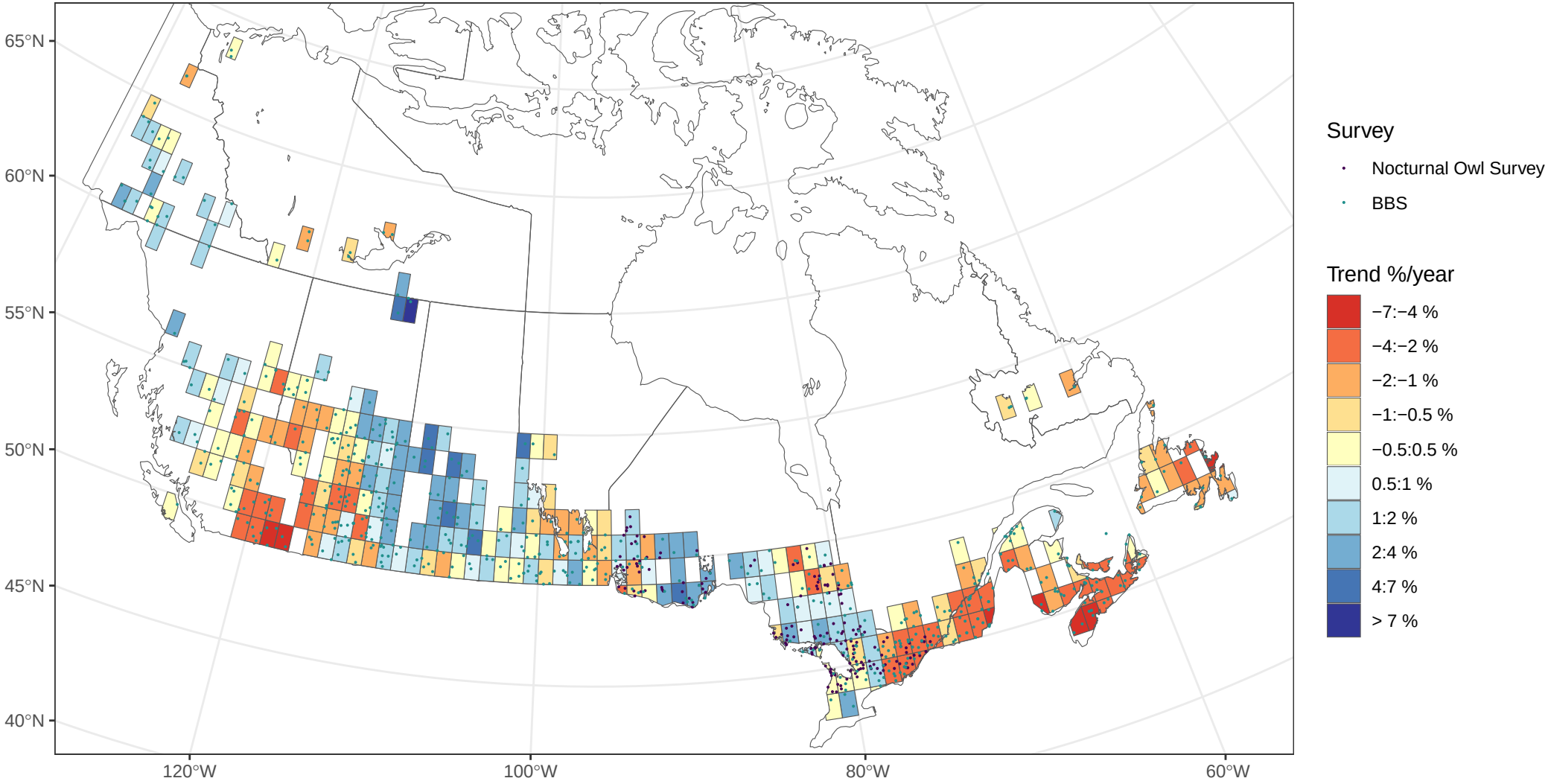

Population trends from an integrated analysis of data from Nocturnal Owl Surveys and BBS using a spatially explicit model to estimate annual changes in counts within grid cells and eBird seasonal relative abundance in 2023 to weight local changes based on relative population size.

Wilson's Snipe Trends across Canada, 2010−2024

173 Nocturnal Owl Survey routes with 2437 surveys and species observed during 37%
647 BBS routes with 8329 surveys and species observed during 74%

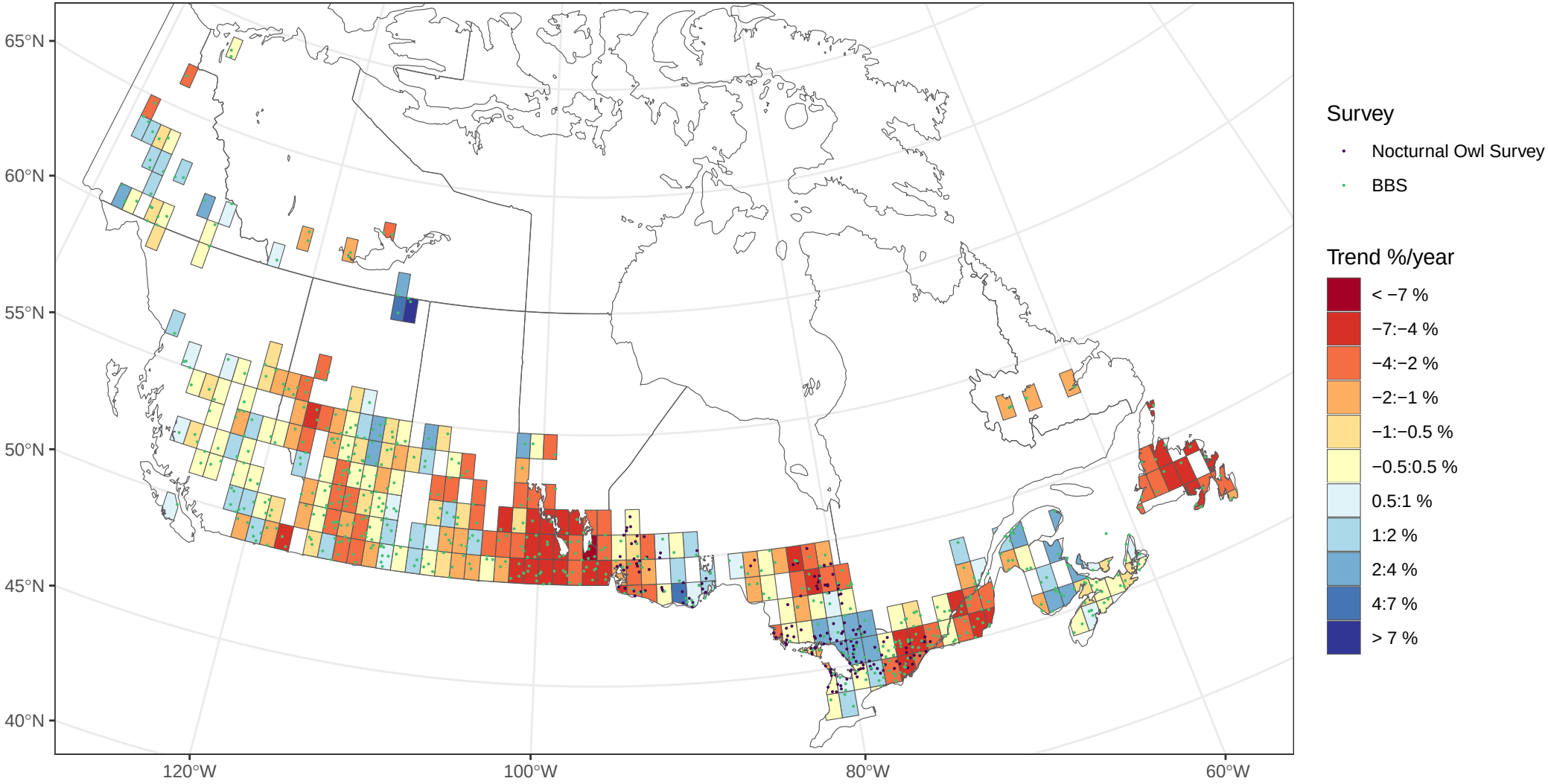

Population trends from an integrated analysis of data from Nocturnal Owl Surveys and BBS using a spatially explicit model to estimate annual changes in counts within grid cells and eBird seasonal relative abundance in 2023 to weight local changes based on relative population size.

Wilson's Snipe Survey routes contributing to trends

173 Nocturnal Owl Survey routes with 2437 surveys and species observed during 37%
647 BBS routes with 8329 surveys and species observed during 74%

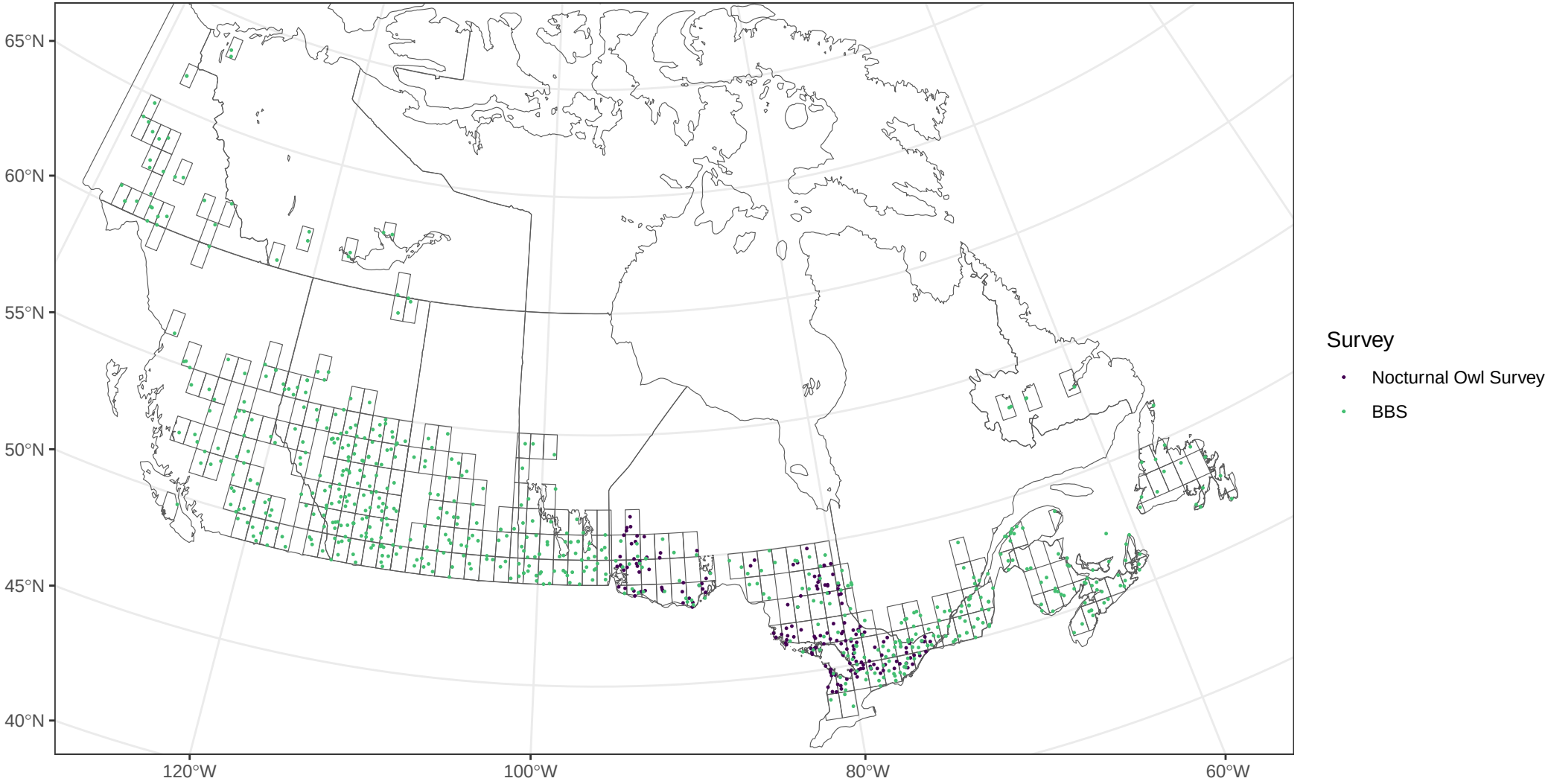

Population trends from an integrated analysis of data from Nocturnal Owl Surveys and BBS using a spatially explicit model to estimate annual changes in counts within grid cells and eBird seasonal relative abundance in 2023 to weight local changes based on relative population size.

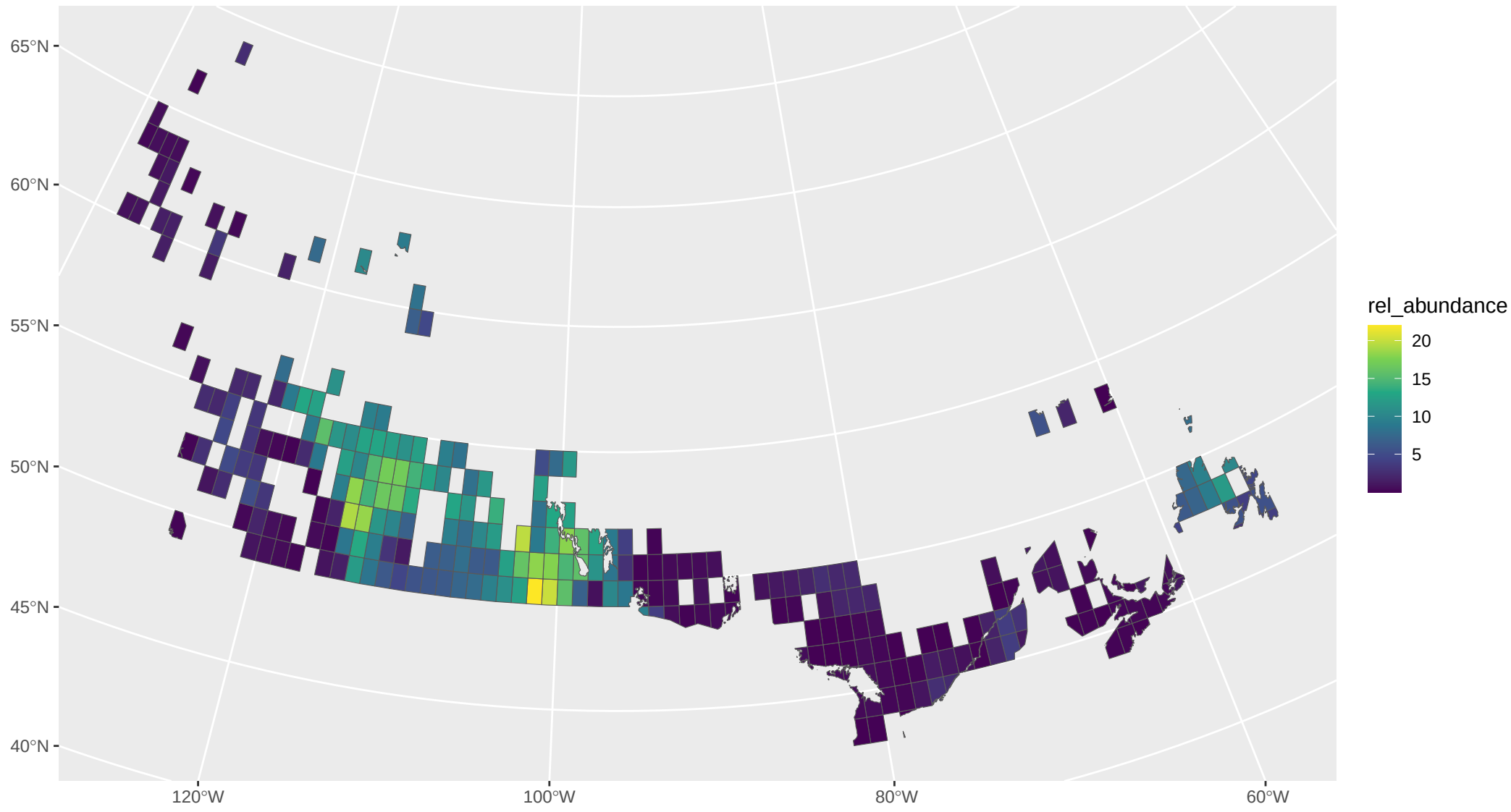
65°N
60°N
55°N
50°N
45°N
40°N
120°W
100°W
80°W
60°W
rel_abundance
20
15
10
5

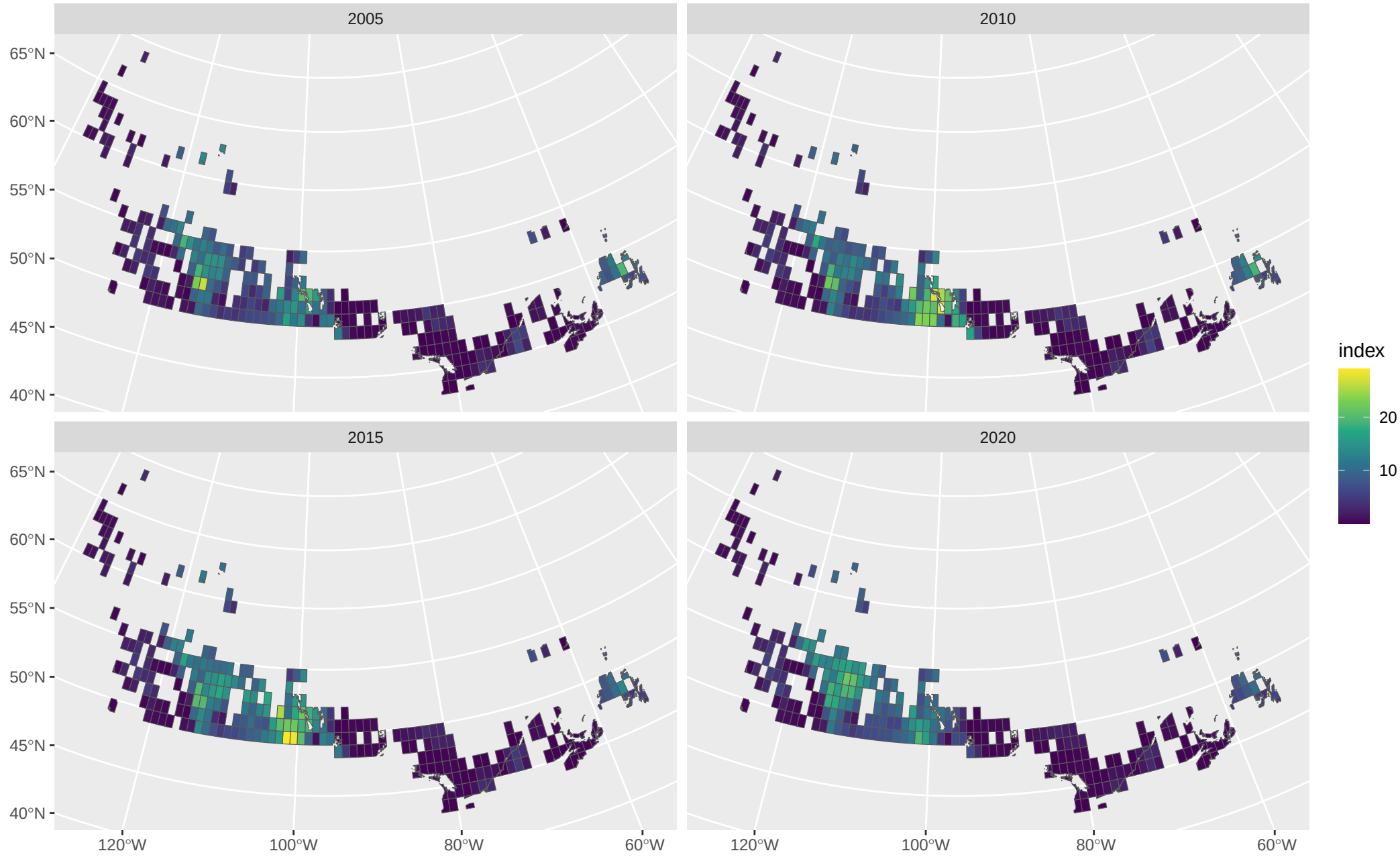
2005
2010
2015
2020
65°N
60°N
55°N
50°N
45°N
40°N
120°W
100°W
80°W
60°W
index
20
10

Wilson's Snipe Population trajectory for Canada

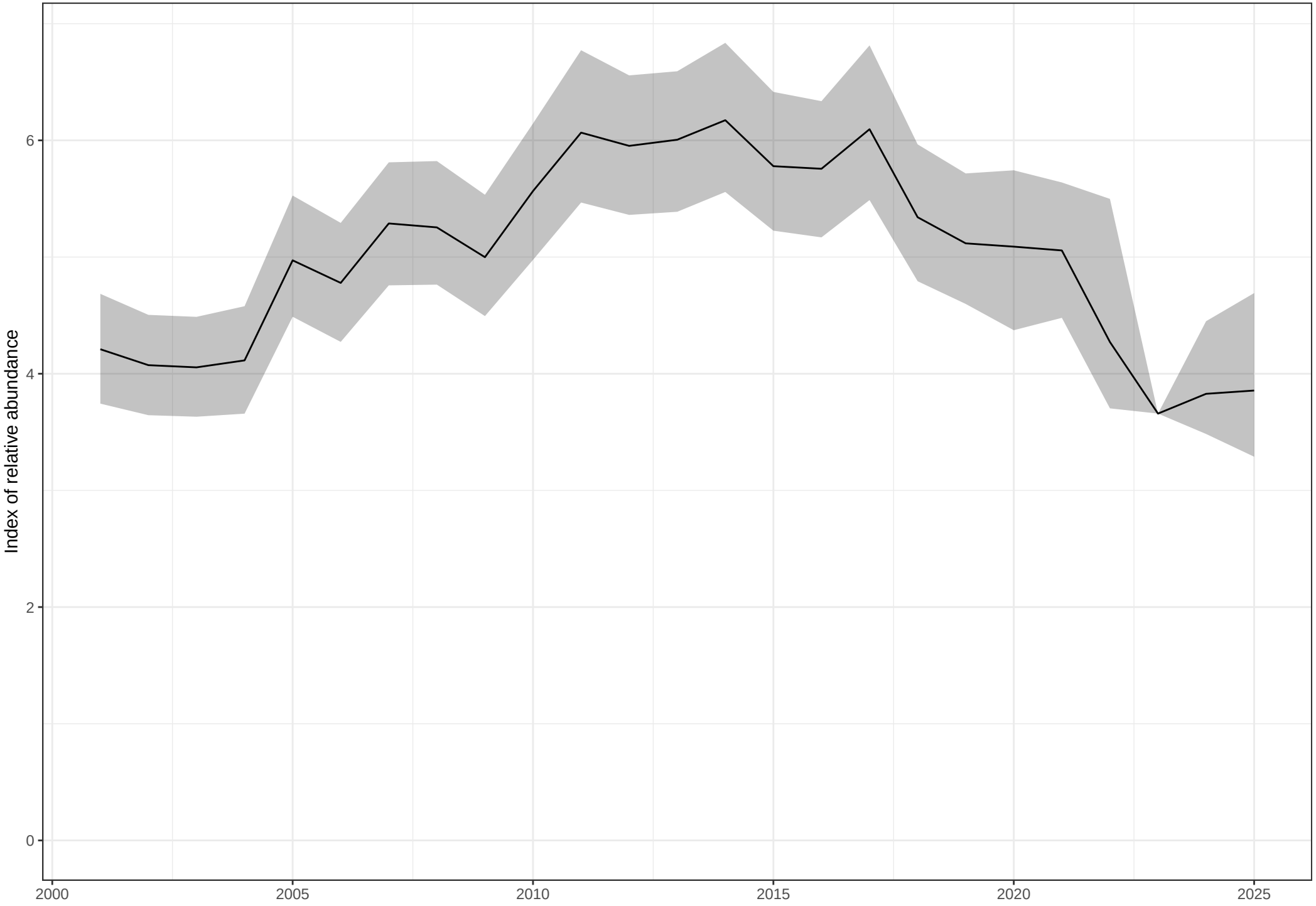

Population trajectory from an integrated analysis of data from Nocturnal Owl Surveys and BBS using a spatially explicit model to estimate annual changes in counts within grid cells and eBird seasonal relative abundance in 2023 to weight local changes based on relative population size.

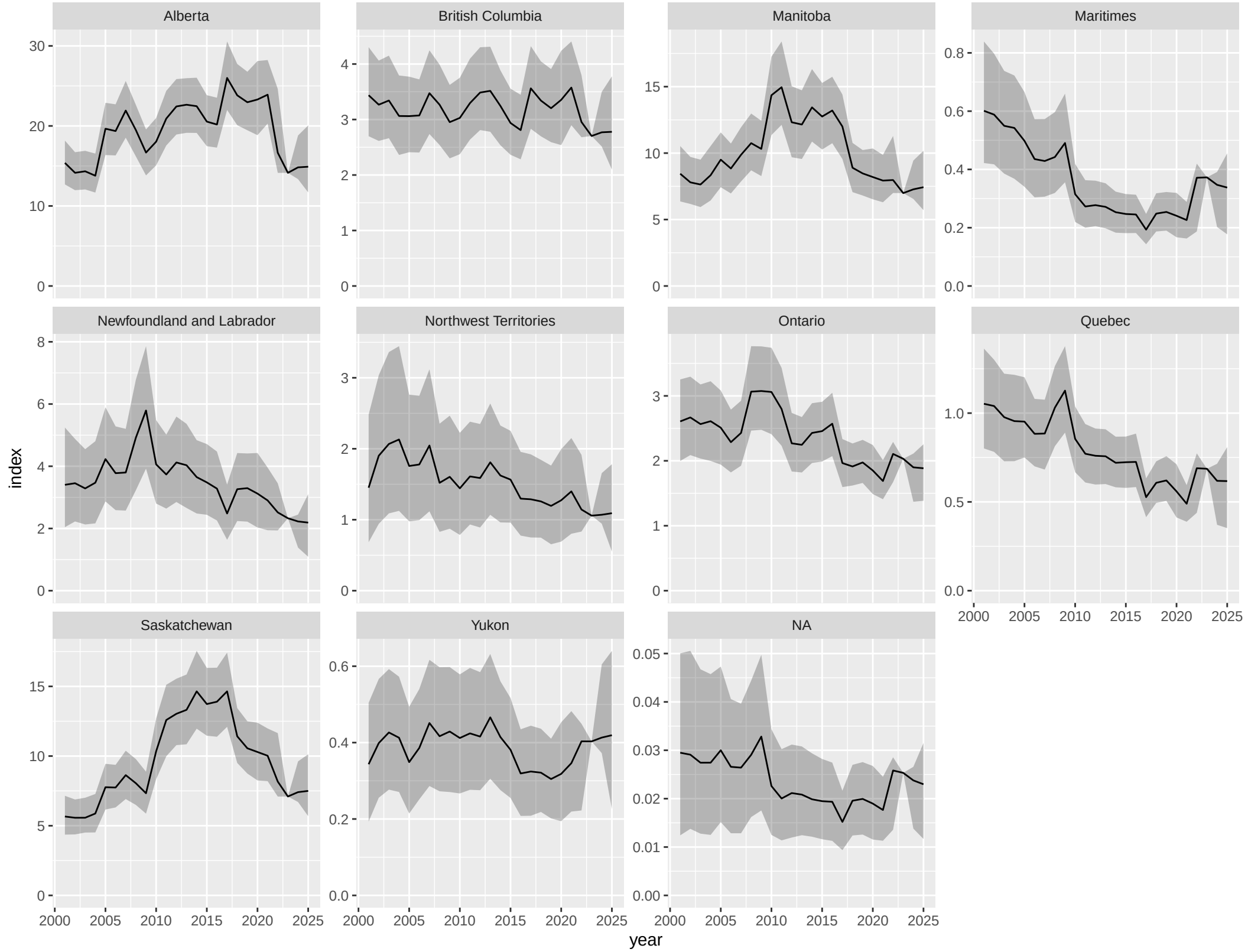
Alberta
British Columbia
Manitoba
Maritimes
Newfoundland and Labrador
Northwest Territories
Ontario
Quebec
Saskatchewan
Yukon
NA
index
year

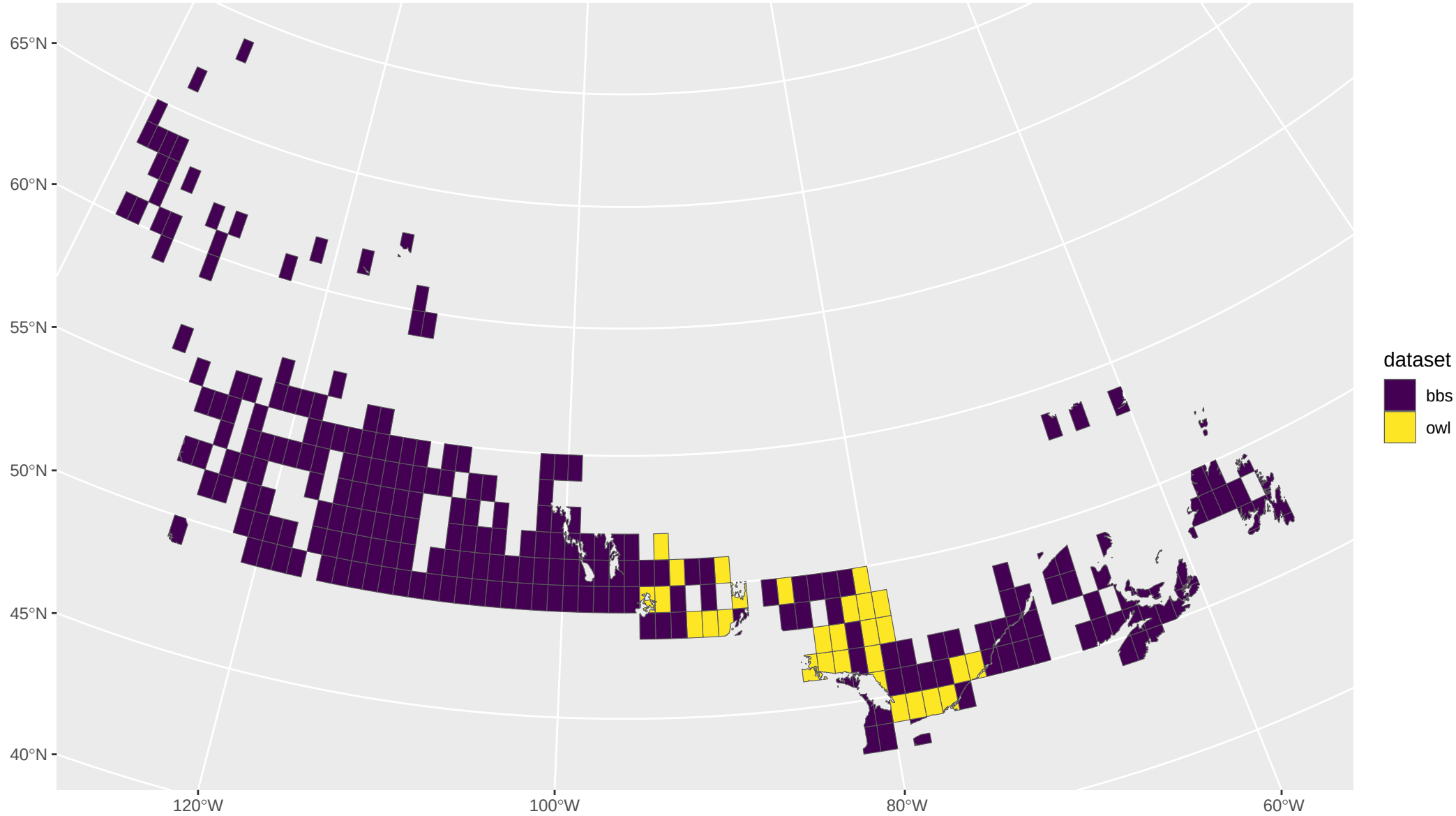
65°N
60°N
55°N
50°N
45°N
40°N
120°W
100°W
80°W
60°W
dataset
bbs
owl